DIVISION ORDER

Diamondback E & P LLC ("payor")
900 NW 63rd St., Ste. 200
Oklahoma City, OK 73116

Date: 4/1/2025
Prepared by: LM/SR

Property Number: 108235
Property Name: MCLINTOCK 18-27 J 10LS
Operator: DIAMONDBACK E & P LLC
County and State: MARTIN COUNTY TEXAS
Property Description:

Effective Date: FIRST SALES

Venture Name	MCLINTOCK 18-27 J 10LS (108235)	TRACT	LEGAL DESCRIPTION	ACRES	LATERAL	TPF	PLAT LATERAL
Prospect							
County, St	MARTIN	1	80 acres, more or less, being the N/2 of the West 160 acres of the N/2 of Section 18, Block 37, Township-2-North, Texas & Pacific Railway Company Survey, Abstract No. 873, Martin County, Texas.	80.000000	1182.31000	0.11400935	L3
Unit Acres		2	80 acres, more or less, being the S/2 of the West 160 acres of the N/2 of Section 18, Block 37, Township-2-North, Texas & Pacific Railway Company Survey, Abstract No. 873, Martin County, Texas.	80.000000	1328.41000	0.12809767	L4
Eff Date	FIRST SALES	3	242.75 acres, more or less, being the West 254.4 acres of the S/2 of Section 18, Block 37, Township-2-North, Texas & Pacific Railway Company Survey, Abstract No. 873, Martin County, Texas, LESS AND EXCEPT 11.71 acres described in a Right-of-Way Deed dated April 1, 1939, recorded in Volume 44, Page 206, Martin	242.750000	2534.38000	0.24438854	L5
Matter No.		4	11.71 acres, more or less, being part of Section 18, Block 37, Township-2-North, Texas & Pacific Railway Company Survey, Abstract No. 873, Martin County, Texas, more particularly described in a Right-of-Way Deed dated April 1, 1939, recorded in Volume 44, Page 206, Martin County Deed Records, from G.T. Hall and wife, Florence Hall, to the State of Texas.	11.710000	121.92000	0.01175656	L6
Landman/DOA		5	160 acres, more or less, being the NW/4 of Section 27, Block 37, Township-2-North, Texas & Pacific Railway Company Survey, Abstract No. 249, Martin County, Texas.	160.000000	2659.15000	0.25642002	L8
Formation	SURFACE TO BASE OF WOLFCAMP	6	160 acres, more or less, being the SW/4 of Section 27, Block 37, Township-2-North, Texas & Pacific Railway Company Survey, Abstract No. 249, Martin County, Texas.	160.000000	2544.12000	0.24532776	L9
DOTO							
				734.500000	10370.29000	1.00000000	

The undersigned severally and not jointly certifies it is the legal owner of the interest set out below of all the oil and related liquid hydrocarbons and gas and associated hydrocarbons produced from the property described below

Production Oil X Gas X Other X

Owner No/Name	Decimal Interest	Interest Type	Pay Code	Owner ISQ	Suspense Description
1080006582 AR MIDLAND LPALLIANCE ROYALTY LLC 2100 ROSS AVE STE 1870 LB-9 DALLAS, TX 75201	0.00060098	RI	SUSPEND	01	DIVISION ORDER NOT SIGNED

THIS AGREEMENT DOES NOT AMEND ANY LEASE OR OPERATING AGREEMENT BETWEEN THE INTEREST OWNERS AND THE LESSEE OR OPERATOR OR ANY OTHER CONTRACTS FOR THE PURCHASE OF OIL OR GAS.

The following provisions apply to each interest owner ("owner") who executes this agreement:

TERMS OF SALE: The undersigned will be paid in accordance with the division of interests set out above. The payor shall pay all parties in accordance with the terms of the oil and gas lease(s).

PAYMENT: From the effective date, after initial payment is made, payment is to be made monthly by payor's check, based on this division of interest not later than 60 days after the end of the calendar month in which oil production is sold and 90 days after the month in which gas is sold from the property listed above, less taxes required by law to be deducted and remitted by payor as purchaser. Payments of less than $100 may be accrued before disbursement until the total amount equals $100 or more, or until 12 months' proceeds accumulate, whichever occurs first. However, the payor may hold accumulated proceeds of less than $10 until production ceases or the payor's responsibility for making payment for production ceases, whichever occurs first. Payee agrees to refund to payor any amounts attributable to an interest or part of an interest that payee does not own.

INDEMNITY: The owner agrees to indemnify and hold payor harmless from all liability resulting from payments made to the owner in accordance with such division of interest, including but not limited to attorney fees or judgments in connection with any suit that affects the owner's interest to which payor is made a party.

DISPUTE; WITHHOLDING OF FUNDS: If a suit is filed that affects the interest of the owner, written notice shall be given to payor by the owner together with a copy of the complaint or petition filed. In the event of a claim or dispute that affects title to the division of interest credited herein, payor is authorized to withhold payments accruing to such interest, without interest unless otherwise required by applicable statute, until the claim or dispute is settled.

TERMINATION: Termination of this agreement is effective on the first day of the month that begins after the 30th day after the date written notice of termination is received by either party.

NOTICES: The owner agrees to notify payor in writing of any change in the division of interest, including changes of interest contingent on payment of money or expiration of time.
No change of interest is binding on payor until the recorded copy of the instrument of change or documents satisfactorily evidencing such change are furnished to payor at the time the change occurs.
Any change of interest shall be made effective on the first day of the month following receipt of such notice by payor.
Any correspondence regarding this agreement shall be furnished to the addresses listed unless otherwise advised by either party.
In addition to the legal rights provided by the terms and provisions of this division order, an owner may have certain statutory rights under the laws of this state.

Owner(s) Signature(s)/Title: _____

Owner(s) SS/Tax ID #: _____

Owner Home Telephone #: _____

Owner Work Telephone #: _____

Owner e-mail address: _____

Failure to furnish your Social Security or Tax I.D. number wi
and any tax withheld will no

PLEASE SIGN A

AR Midland, LP
BY: Dale Operating Company, as attorney-in-fact
BY: Steve Abney, Co-CEO
TAX ID # 84-2727335
2100 Ross Ave, Suite 1870, LB-9
Dallas, TX 75201
Contact: shaneh@dale-energy.com
Phone: (214) 888-8588

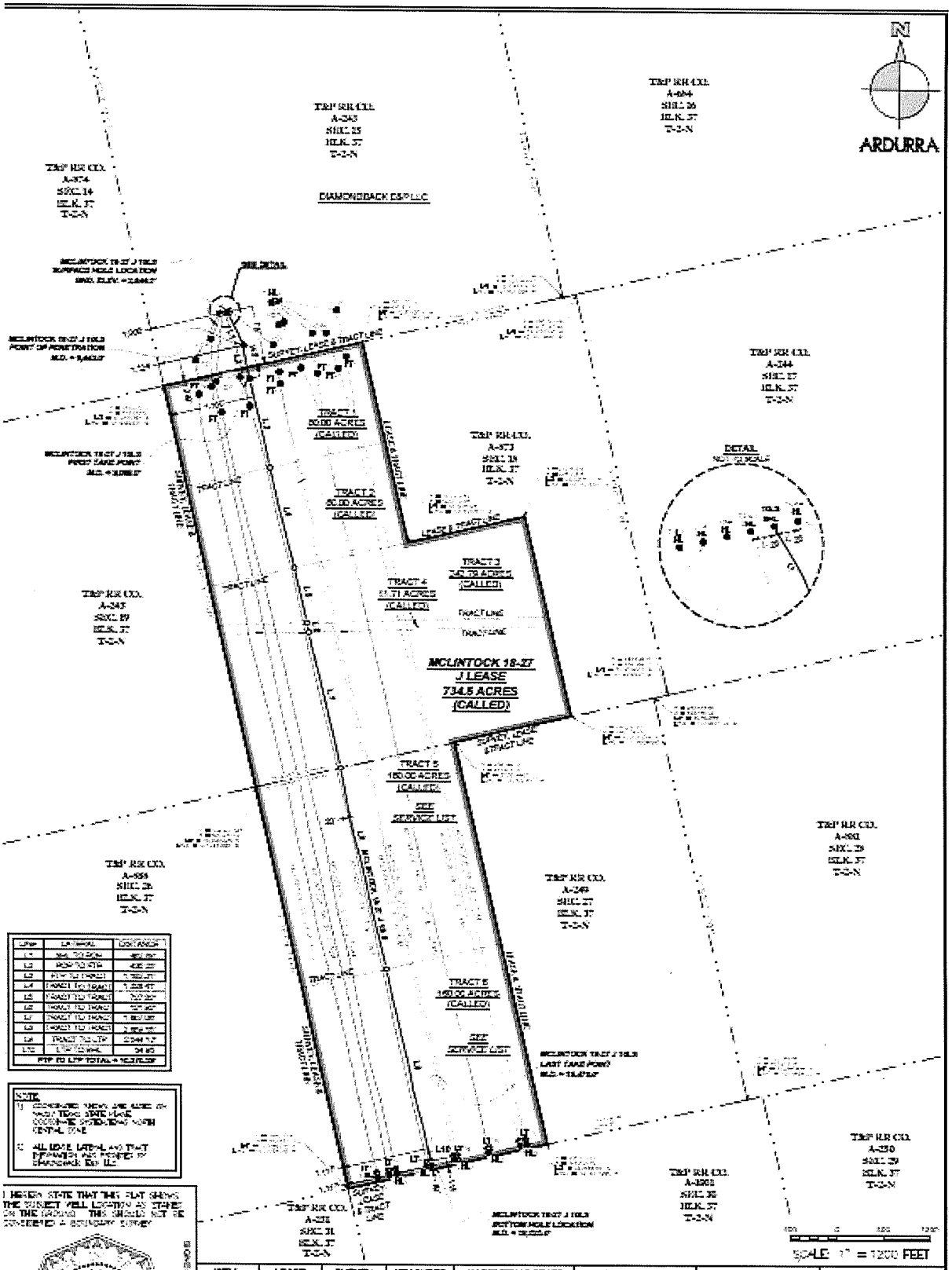

LINE	LATITUDE	DISTANCE
L1	[illegible]	[illegible]
L2	[illegible]	[illegible]
L3	[illegible]	[illegible]
L4	TRACT TO TRACT	[illegible]
L5	TRACT TO TRACT	[illegible]
L6	TRACT TO TRACT	[illegible]
L7	TRACT TO TRACT	[illegible]
L8	TRACT TO TRACT	[illegible]
L9	TRACT TO LTP	[illegible]
L10	LTP TO BHL	[illegible]
FTP TO LTP TOTAL = [illegible]		

NOTE:
1) COORDINATES SHOWN ARE BASED ON NAD27 TEXAS STATE PLANE COORDINATE SYSTEM, NORTH CENTRAL ZONE
2) ALL LEASE LATERAL AND TRACT DIMENSIONS ARE SHOWN BY DIAMONDBACK E&P LLC

I HEREBY STATE THAT THIS PLAT SHOWS THE SUBJECT WELL LOCATION AS STAKED ON THE GROUND. THIS SHALL NOT BE CONSIDERED A BOUNDARY SURVEY.

SERGIO A. CANALES
REGISTERED PROFESSIONAL LAND SURVEYOR
LICENSE NO. [illegible]

WELL NUMBER	LEASE CALLS	SURVEY CALLS	MEASURED DEPTH	NAD27 TEXAS STATE PLANE COORDINATES	NAD27 GEOGRAPHIC COORDINATES(DMS)	NAD27 GEOGRAPHIC COORDINATES(DD)	NAD83 GEOGRAPHIC COORDINATES(DD)
J 10LS SHL	OFF LEASE [illegible] FSL	1,000' FWL [illegible] FSL	- - -	Y = [illegible] X = [illegible]	LAT. = [illegible] N LONG. = [illegible] W	LAT. = [illegible] N LONG. = [illegible] W	LAT. = [illegible] N LONG. = [illegible] W
J 10LS POP	OFF LEASE 239 FSL	1,124' FWL 239' FSL	8,443.0'	Y = [illegible] X = [illegible]	LAT. = [illegible] N LONG. = [illegible] W	LAT. = [illegible] N LONG. = [illegible] W	LAT. = [illegible] N LONG. = [illegible] W
J 10LS FTP	1,100' FWL 140' FNL	1,100' FWL 140' FNL	9,569.0'	Y = [illegible] X = [illegible]	LAT. = [illegible] N LONG. = [illegible] W	LAT. = [illegible] N LONG. = [illegible] W	LAT. = [illegible] N LONG. = [illegible] W
J 10LS LTP	1,117' FWL 115' FSL	1,117' FWL 115' FSL	19,470.0'	Y = [illegible] X = [illegible]	LAT. = [illegible] N LONG. = [illegible] W	LAT. = [illegible] N LONG. = [illegible] W	LAT. = [illegible] N LONG. = [illegible] W
J 10LS BHL	1,117' FWL 60' FSL	1,117' FWL 60' FSL	19,525.0'	Y = [illegible] X = [illegible]	LAT. = [illegible] N LONG. = [illegible] W	LAT. = [illegible] N LONG. = [illegible] W	LAT. = [illegible] N LONG. = [illegible] W

ARDURRA

AN AS-DRILLED PLAT FOR:
DIAMONDBACK E&P LLC
MCLINTOCK 18-27 J 10LS
SITUATED IN THE T&P RR CO. SURVEYS, SEC. 18, A-873
SEC. 19, A-245 & SEC. 27, A-249, BIG SPRING OUT OF BLOCK 37, T-2-N

DATE OF SURVEY: [illegible]
DRAWN BY: [illegible]
FILE #: [illegible]
DRAWING #: [illegible]

DIVISION ORDER

Diamondback E & P LLC ("payor")
900 NW 63rd St., Ste. 200
Oklahoma City, OK 73116

Date: 4/1/2025
Prepared by: LM/SR

Property Number: 108236
Property Name: MCLINTOCK 18-27 E 5JM
Operator: DIAMONDBACK E & P LLC
County and State: MARTIN COUNTY TEXAS
Property Description:

Effective Date: FIRST SALES

Venture Name	MCLINTOCK 18-27 E 5JM (108236	TRACT	LEGAL DESCRIPTION	ACRES	LATERAL	TPF	PLAT LATERAL
Prospect							
County, St	MARTIN	1	80 acres, more or less, being the N/2 of the West 160 acres of the N/2 of Section 18, Block 37, Township-2-North, Texas & Pacific Railway Company Survey, Abstract No. 873, Martin County,	80.000000	1188.08000	0.11449994	L3
Unit Acres		2	80 acres, more or less, being the S/2 of the West 160 acres of the N/2 of Section 18, Block 37, Township-2-North, Texas & Pacific Railway Company Survey, Abstract No. 873, Martin County,	80.000000	1328.41000	0.12802409	L4
Eff Date	FIRST SALES	3	242.79 acres, more or less, being the West 254.4 acres of the S/2 of Section 18, Block 37, Township-2-North, Texas & Pacific Railway Company Survey, Abstract No. 873, Martin County, Texas, LESS AND EXCEPT 11.71 acres described in a Right-of-Way Deed dated April 1, 1939, recorded in Volume 44, Page 206,	242.790000	2534.80000	0.24428864	L5
Matter No.		4	11.71 acres, more or less, being part of Section 18, Block 37, Township-2-North, Texas & Pacific Railway Company Survey, Abstract No. 873, Martin County, Texas, more particularly described in a Right-of-Way Deed dated April 1, 1939, recorded in Volume 44, Page 206, Martin County Deed Records, from G.T. Hall and wife, Florence Hall, to the State of Texas.	11.710000	121.92000	0.01174991	L6
Landman/DOA		5	160 acres, more or less, being the NW/4 of Section 27, Block 37, Township-2-North, Texas & Pacific Railway Company Survey, Abstract No. 243, Martin County, Texas.	160.000000	2658.68000	0.25622744	L8
Formation	SURFACE TO BASE OF WOLFC/	6	160 acres, more or less, being the SW/4 of Section 27, Block 37, Township-2-North, Texas & Pacific Railway Company Survey, Abstract No. 243, Martin County, Texas.	160.000000	2544.36000	0.24520997	L9
DOTO							
				734.500000	10376.25000	1.00000000	

The undersigned severally and not jointly certifies it is the legal owner of the interest set out below of all the oil and related liquid hydrocarbons and gas and associated hydrocarbons produced from the property described below

Production Oil X Gas X Other X

Owner No/Name	Decimal Interest	Interest Type	Pay Code	Owner ISQ	Suspense Description
1080006582 AR MIDLAND LPALLIANCE ROYALTY LLC 2100 ROSS AVE STE 1870 LB-9 DALLAS, TX 75201	0.00060053	RI	SUSPEND	01	DIVISION ORDER NOT SIGNED

THIS AGREEMENT DOES NOT AMEND ANY LEASE OR OPERATING AGREEMENT BETWEEN THE INTEREST OWNERS AND THE LESSEE OR OPERATOR OR ANY OTHER CONTRACTS FOR THE PURCHASE OF OIL OR GAS.

The following provisions apply to each interest owner ("owner") who executes this agreement:

TERMS OF SALE: The undersigned will be paid in accordance with the division of interests set out above. The payor shall pay all parties in accordance with the terms of the oil and gas lease(s).

PAYMENT: From the effective date, after initial payment is made, payment is to be made monthly by payor's check, based on this division of interest not later than 60 days after the end of the calendar month in which oil production is sold and 90 days after the month in which gas is sold from the property listed above, less taxes required by law to be deducted and remitted by payor as purchaser. Payments of less than $100 may be accrued before disbursement until the total amount equals $100 or more, or until 12 months' proceeds accumulate, whichever occurs first. However, the payor may hold accumulated proceeds of less than $10 until production ceases or the payor's responsibility for making payment for production ceases, whichever occurs first. Payee agrees to refund to payor any amounts attributable to an interest or part of an interest that payee does not own.

INDEMNITY: The owner agrees to indemnify and hold payor harmless from all liability resulting from payments made to the owner in accordance with such division of interest, including but not limited to attorney fees or judgments in connection with any suit that affects the owner's interest to which payor is made a party.

DISPUTE; WITHHOLDING OF FUNDS: If a suit is filed that affects the interest of the owner, written notice shall be given to payor by the owner together with a copy of the complaint or petition filed. In the event of a claim or dispute that affects title to the division of interest credited herein, payor is authorized to withhold payments accruing to such interest, without interest unless otherwise required by applicable statute, until the claim or dispute is settled.

TERMINATION: Termination of this agreement is effective on the first day of the month that begins after the 30th day after the date written notice of termination is received by either party.

NOTICES: The owner agrees to notify payor in writing of any change in the division of interest, including changes of interest contingent on payment of money or expiration of time.
No change of interest is binding on payor until the recorded copy of the instrument of change or documents satisfactorily evidencing such change are furnished to payor at the time the change occurs.
Any change of interest shall be made effective on the first day of the month following receipt of such notice by payor.
Any correspondence regarding this agreement shall be furnished to the addresses listed unless otherwise advised by either party.
In addition to the legal rights provided by the terms and provisions of this division order, an owner may have certain statutory rights under the laws of this state.

Owner(s) Signature(s)/Title: _____

Owner(s) SS/Tax ID #: _____

Owner Home Telephone #: _____

Owner Work Telephone #: _____

Owner e-mail address: _____

Failure to furnish your Social Security or Tax I.D. number will
and any tax withheld will not

PLEASE SIGN A

AR Midland, LP
BY: Dale Operating Company, as attorney-in-fact
BY: Steve Abney, Co-CEO
TAX ID # 84-2727335
2100 Ross Ave, Suite 1870, LB-9
Dallas, TX 75201
Contact: shaneh@dale-energy.com
Phone: (214) 888-8588

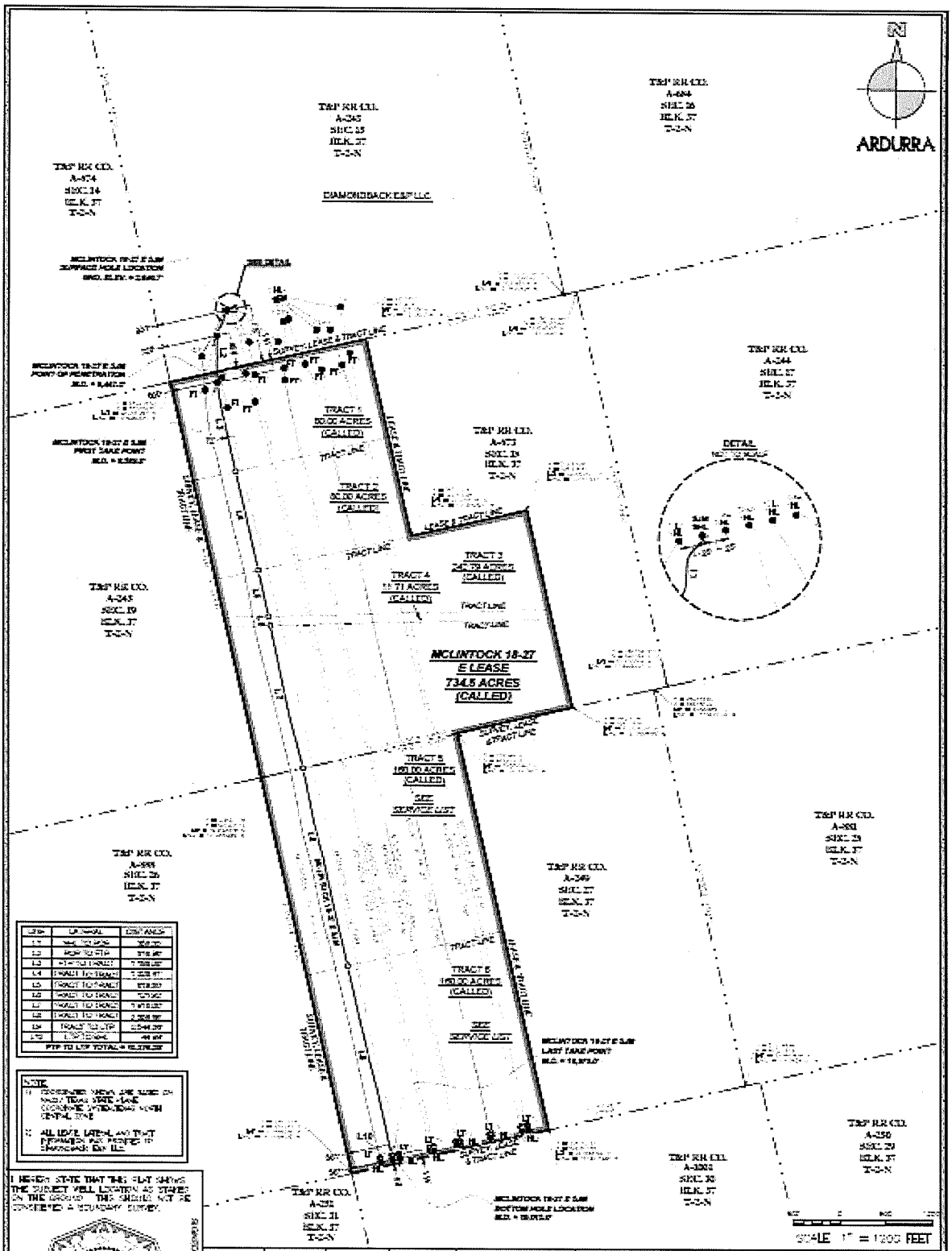

WELL NUMBER	LEASE CALLS	SURVEY CALLS	MEASURED DEPTH	NAD27 TEXAS STATE PLANE COORDINATES	NAD27 GEOGRAPHIC COORDINATES(DMS)	NAD27 GEOGRAPHIC COORDINATES(DD)	NAD83 GEOGRAPHIC COORDINATES(DD)
E SJM SHL	OFF LEASE 757' FSL	92' FWL 757' FSL	- - -	Y = 365,481.96 X = 820,594.76	LAT. = 32°15'50.05" N LONG. = 101°25'50.02" W	LAT. = 32.3139009° N LONG. = 101.3972239° W	LAT. = 32.3139009° N LONG. = 101.3972239° W
E SJM POP	OFF LEASE 464' FSL	720' FWL 464' FSL	8,447.0'	Y = 365,150.06 X = 820,459.06	LAT. = 32°15'53.51" N LONG. = 101°25'00.03" W	LAT. = 32.3148097° N LONG. = 101.3967507° W	LAT. = 32.3148097° N LONG. = 101.3967507° W
E SJM FTP	600' FWL 141' FNL	600' FWL 141' FNL	8,598.0'	Y = 364,520.22 X = 820,471.94	LAT. = 32°15'47.40" N LONG. = 101°25'58.50" W	LAT. = 32.3131667° N LONG. = 101.3966250° W	LAT. = 32.3131667° N LONG. = 101.3966250° W
E SJM LTP	550' FWL 114' FSL	550' FWL 114' FSL	19,970.0'	Y = 354,410.39 X = 823,754.31	LAT. = 32°14'06.30" N LONG. = 101°25'26.01" W	LAT. = 32.3350833° N LONG. = 101.3972002° W	LAT. = 32.3350833° N LONG. = 101.3972002° W
E SJM BHL	550' FWL 69' FSL	550' FWL 69' FSL	19,919.0'	Y = 354,367.53 X = 823,754.33	LAT. = 32°14'05.83" N LONG. = 101°25'26.01" W	LAT. = 32.3349953° N LONG. = 101.3972003° W	LAT. = 32.3349953° N LONG. = 101.3972003° W

ARDURRA

AN AS-DRILLED PLAT FOR:
DIAMONDBACK E&P LLC
MCLINTOCK 18-27 E SJM
SITUATED IN THE T&P RR CO. SURVEY, SEC. 35, A-243

DIVISION ORDER

Diamondback E & P LLC ("payor")
900 NW 63rd St., Ste. 200
Oklahoma City, OK 73116

Date: 4/1/2025
Prepared by: LM/SR

Property Number: 108237
Property Name: MCLINTOCK 18-27 Q 17WA
Operator: DIAMONDBACK E & P LLC
County and State: MARTIN COUNTY TEXAS
Property Description:

Effective Date: FIRST SALES

Venture Name	MCLINTOCK 18-27 Q 17WA (10823	TRACT	LEGAL DESCRIPTION	ACRES	LATERAL	TPF	PLAT LATERAL
Prospect							
County, St	MARTIN	1	80 acres, more or less, being the N/2 of the West 160 acres of the N/2 of Section 18, Block 37, Township-2-North, Texas & Pacific Railway Company Survey, Abstract No. 873, Martin County,	80.000000	833.52000	0.08316820	L3
Unit Acres		2	80 acres, more or less, being the S/2 of the West 160 acres of the N/2 of Section 18, Block 37, Township-2-North, Texas & Pacific Railway Company Survey, Abstract No. 873, Martin County,	80.000000	1329.00000	0.13260694	L4
Eff Date	FIRST SALES	3	242.79 acres, more or less, being the West 254.4 acres of the S/2 of Section 18, Block 37, Township-2-North, Texas & Pacific Railway Company Survey, Abstract No. 873, Martin County, Texas, LESS AND EXCEPT 11.71 acres described in a Right-of-Way Deed dated April 1, 1939, recorded in Volume 44, Page 206,	242.790000	2534.39000	0.25288013	L5
Matter No.		4	11.71 acres, more or less, being part of Section 18, Block 37, Township-2-North, Texas & Pacific Railway Company Survey, Abstract No. 873, Martin County, Texas, more particularly described in a Right-of-Way Deed dated April 1, 1939, recorded in Volume 44, Page 206, Martin County Deed Records, from G.T. Hall and wife, Florence Hall, to the State of Texas.	11.710000	122.40000	0.01221301	L6
Landman/DOA		5	160 acres, more or less, being the NW/4 of Section 27, Block 37, Township-2-North, Texas & Pacific Railway Company Survey, Abstract No. 249, Martin County, Texas.	160.000000	2658.80000	0.26529370	L8
Formation	SURFACE TO BASE OF WOLFC	6	160 acres, more or less, being the SW/4 of Section 27, Block 37, Township-2-North, Texas & Pacific Railway Company Survey, Abstract No. 249, Martin County, Texas.	160.000000	2543.39000	0.25383802	L9
DOTO							
				734.500000	10022.10000	1.00000000	

The undersigned severally and not jointly certifies it is the legal owner of the interest set out below of all the oil and related liquid hydrocarbons and gas and associated hydrocarbons produced from the property described below

Production Oil X Gas X Other X

Owner No/Name	Decimal Interest	Interest Type	Pay Code	Owner ISQ	Suspense Description
1080006582 AR MIDLAND LPALLIANCE ROYALTY LLC 2100 ROSS AVE STE 1870 LB-9 DALLAS, TX 75201	0.00062178	RI	SUSPEND	01	DIVISION ORDER NOT SIGNED

THIS AGREEMENT DOES NOT AMEND ANY LEASE OR OPERATING AGREEMENT BETWEEN THE INTEREST OWNERS AND THE LESSEE OR OPERATOR OR ANY OTHER CONTRACTS FOR THE PURCHASE OF OIL OR GAS.

The following provisions apply to each interest owner ("owner") who executes this agreement:

TERMS OF SALE: The undersigned will be paid in accordance with the division of interests set out above. The payor shall pay all parties in accordance with the terms of the oil and gas lease(s).

PAYMENT: From the effective date, after initial payment is made, payment is to be made monthly by payor's check, based on this division of interest not later than 60 days after the end of the calendar month in which oil production is sold and 90 days after the month in which gas is sold from the property listed above, less taxes required by law to be deducted and remitted by payor as purchaser. Payments of less than $100 may be accrued before disbursement until the total amount equals $100 or more, or until 12 months' proceeds accumulate, whichever occurs first. However, the payor may hold accumulated proceeds of less than $10 until production ceases or the payor's responsibility for making payment for production ceases, whichever occurs first. Payee agrees to refund to payor any amounts attributable to an interest or part of an interest that payee does not own.

INDEMNITY: The owner agrees to indemnify and hold payor harmless from all liability resulting from payments made to the owner in accordance with such division of interest, including but not limited to attorney fees or judgments in connection with any suit that affects the owner's interest to which payor is made a party.

DISPUTE; WITHHOLDING OF FUNDS: If a suit is filed that affects the interest of the owner, written notice shall be given to payor by the owner together with a copy of the complaint or petition filed. In the event of a claim or dispute that affects title to the division of interest credited herein, payor is authorized to withhold payments accruing to such interest, without interest unless otherwise required by applicable statute, until the claim or dispute is settled.

TERMINATION: Termination of this agreement is effective on the first day of the month that begins after the 30th day after the date written notice of termination is received by either party.

NOTICES: The owner agrees to notify payor in writing of any change in the division of interest, including changes of interest contingent on payment of money or expiration of time.
No change of interest is binding on payor until the recorded copy of the instrument of change or documents satisfactorily evidencing such change are furnished to payor at the time the change occurs.
Any change of interest shall be made effective on the first day of the month following receipt of such notice by payor.
Any correspondence regarding this agreement shall be furnished to the addresses listed unless otherwise advised by either party.
In addition to the legal rights provided by the terms and provisions of this division order, an owner may have certain statutory rights under the laws of this state.

Owner(s) Signature(s)/Title: _____

Owner(s) SS/Tax ID #: _____

Owner Home Telephone #: _____

Owner Work Telephone #: _____

Owner e-mail address: _____

Failure to furnish your Social Security or Tax I.D. number and any tax withheld will

PLEASE SIGN

AR Midland, LP
BY: Dale Operating Company, as attorney-in-fact
BY: Steve Abney, Co-CEO
TAX ID # 84-2727335
2100 Ross Ave, Suite 1870, LB-9
Dallas, TX 75201
Contact: shaneh@dale-energy.com
Phone: (214) 888-8588

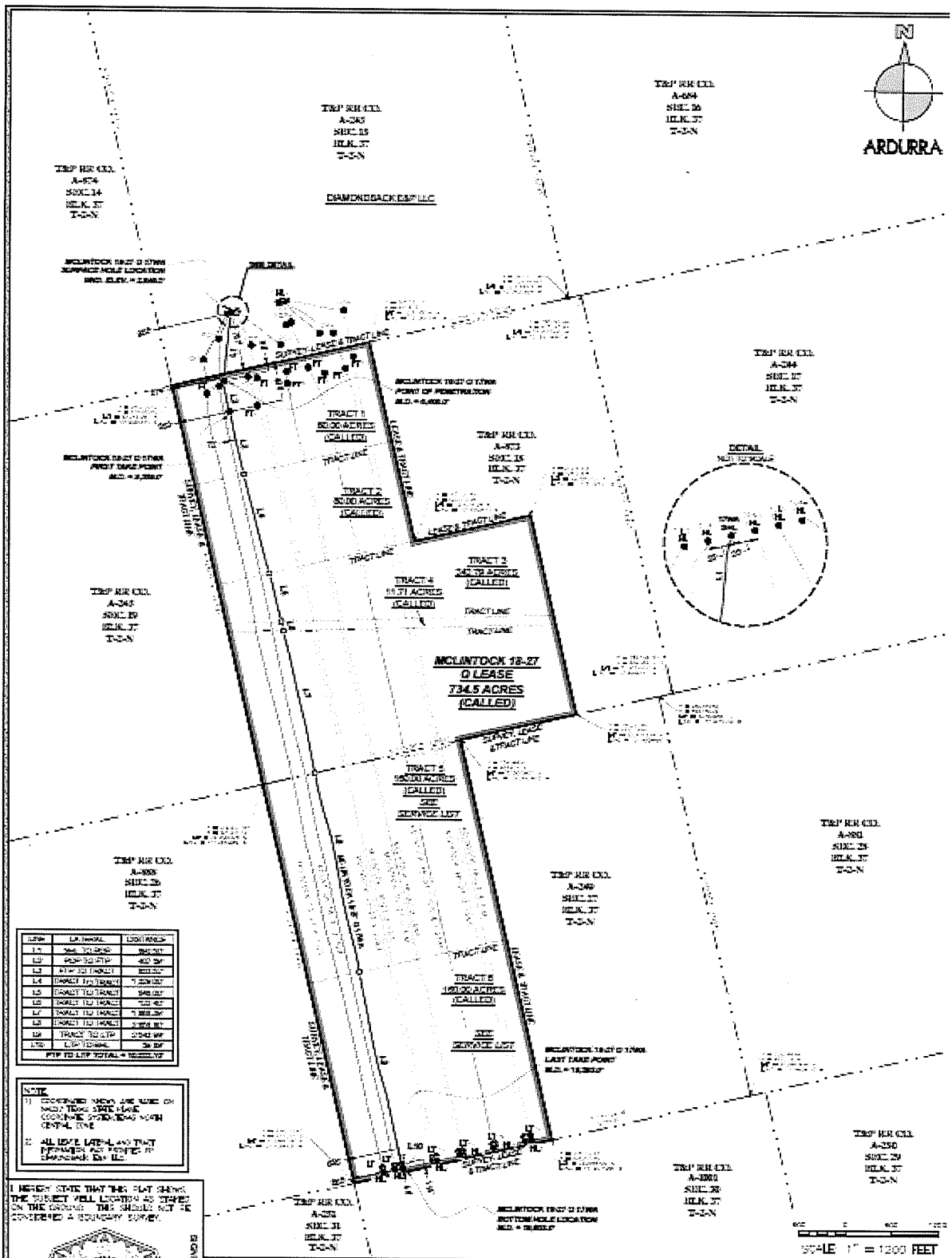

LINE	LATITUDE	DISTANCE
L1	[illegible]	[illegible]
L2	[illegible]	[illegible]
L3	[illegible]	[illegible]
L4	[illegible]	[illegible]
L5	[illegible]	[illegible]
L6	[illegible]	[illegible]
L7	[illegible]	[illegible]
L8	[illegible]	[illegible]
L9	[illegible]	[illegible]
L10	[illegible]	[illegible]
PTP TO LTP TOTAL = [illegible]		

NOTE

1) COORDINATES SHOWN ARE BASED ON NAD27 TEXAS STATE PLANE COORDINATE SYSTEM, NORTH CENTRAL ZONE

2) ALL BOX LATERAL AND TRACT DIMENSIONS ARE PROVIDED BY DIAMONDBACK E&P LLC

I HEREBY STATE THAT THIS PLAT SHOWS THE SUBJECT WELL LOCATION AS STAKED ON THE GROUND. THIS SHOULD NOT BE CONSIDERED A BOUNDARY SURVEY.

REGISTERED PROFESSIONAL LAND SURVEYOR

SERGIO J. CANALES
REGISTERED PROFESSIONAL LAND SURVEYOR
LICENSE NO. [illegible]

WELL NUMBER	LEASE CALLS	SURVEY CALLS	MEASURED DEPTH	NAD27 TEXAS STATE PLANE COORDINATES	NAD27 GEOGRAPHIC COORDINATES(DMS)	NAD27 GEOGRAPHIC COORDINATES(DD)	NAD83 GEOGRAPHIC COORDINATES(DD)
Q 17WA SHL	OFF LEASE 797' FSL	955' FWL 797' FSL	- - -	Y = 265,467.46 X = 820,615.17	LAT. = 32°1'55.91" N LONG. = 101°57'50.34" W	LAT. = 32.31539997° N LONG. = 101.9639281° W	LAT. = 32.31539250° N LONG. = 101.9639140° W
Q 17WA PDP	574' FWL 98' FNL	574' FWL 98' FNL	9,408.0'	Y = 264,901.21 X = 820,032.58	LAT. = 32°1'49.41" N LONG. = 101°57'58.91" W	LAT. = 32.31359450° N LONG. = 101.9663640° W	LAT. = 32.31359700° N LONG. = 101.9663130° W
Q 17WA FTP	955' FWL 495' FNL	955' FWL 495' FNL	9,559.0'	Y = 264,499.01 X = 820,603.36	LAT. = 32°1'44.17" N LONG. = 101°57'57.69" W	LAT. = 32.31227697° N LONG. = 101.9660000° W	LAT. = 32.31226450° N LONG. = 101.9660000° W
Q 17WA LTP	955' FWL 115' FSL	955' FWL 115' FSL	19,500.0'	Y = 254,403.01 X = 820,645.57	LAT. = 32°1'00.55" N LONG. = 101°57'58.50" W	LAT. = 32.2667208° N LONG. = 101.9663420° W	LAT. = 32.2666242° N LONG. = 101.9663500° W
Q 17WA BHL	955' FWL 55' FSL	955' FWL 55' FSL	19,650.0'	Y = 254,374.57 X = 820,659.17	LAT. = 32°1'00.58" N LONG. = 101°57'58.77" W	LAT. = 32.2666849° N LONG. = 101.9663002° W	LAT. = 32.2666852° N LONG. = 101.9663134° W

ARDURRA

AN AS-DRILLED PLAT FOR:
DIAMONDBACK E&P LLC
MCLINTOCK 18-27 Q 17WA
SITUATED IN THE T&P RR CO. SURVEY, SEC. 25, A-243
[illegible]

DATE: [illegible]
DRAWN BY: [illegible]
TRIP BY: [illegible]
SCALE: [illegible]

DIVISION ORDER

Diamondback E & P LLC ("payor")
900 NW 63rd St., Ste. 200
Oklahoma City, OK 73116

Date: 4/1/2025
Prepared by: LM/SR

Property Number: 108238
Property Name: MCLINTOCK 18-27 I 21WB
Operator: DIAMONDBACK E & P LLC
County and State: MARTIN COUNTY TEXAS
Property Description:

Effective Date: FIRST SALES

Venture Name	MCLINTOCK 18-27 I 21WB (108238)	TRACT	LEGAL DESCRIPTION	ACRES	LATERAL	TPF	PLAT LATERAL
Prospect							
County, St	MARTIN	1	80 acres, more or less, being the N/2 of the West 160 acres of the N/2 of Section 18, Block 37, Township-2-North, Texas & Pacific Railway Company Survey, Abstract No. 873, Martin County, Texas.	80.000000	1064.80000	0.10384059	L3
Unit Acres		2	80 acres, more or less, being the S/2 of the West 160 acres of the N/2 of Section 18, Block 37, Township-2-North, Texas & Pacific Railway Company Survey, Abstract No. 873, Martin County, Texas.	80.000000	1328.05000	0.12951354	L4
Eff Date	FIRST SALES	3	242.79 acres, more or less, being the West 254.4 acres of the S/2 of Section 18, Block 37, Township-2-North, Texas & Pacific Railway Company Survey, Abstract No. 873, Martin County, Texas, LESS AND EXCEPT 11.71 acres described in a Right-of-Way Deed dated April 1, 1939, recorded in Volume 44, Page 206, Martin	242.790000	2533.51000	0.24707191	L5
Matter No.		4	11.71 acres, more or less, being part of Section 18, Block 37, Township-2-North, Texas & Pacific Railway Company Survey, Abstract No. 873, Martin County, Texas, more particularly described in a Right-of-Way Deed dated April 1, 1939, recorded in Volume 44, Page 206, Martin County Deed Records, from G.T. Hall and wife, Florance Hall, to the State of Texas.	11.710000	122.58000	0.01195420	L6
Landman/DOA		5	160 acres, more or less, being the NW/4 of Section 27, Block 37, Township-2-North, Texas & Pacific Railway Company Survey, Abstract No. 249, Martin County, Texas.	160.000000	2659.84000	0.25939182	L8
Formation	SURFACE TO BASE OF WOLFCAMP	6	160 acres, more or less, being the SW/4 of Section 27, Block 37, Township-2-North, Texas & Pacific Railway Company Survey, Abstract No. 249, Martin County, Texas.	160.000000	2545.36000	0.24822755	L9
DOTO							
				734.500000	10254.14000	1.00000000	

The undersigned severally and not jointly certifies it is the legal owner of the interest set out below of all the oil and related liquid hydrocarbons and gas and associated hydrocarbons produced from the property described below

Production Oil X Gas X Other X

Owner No/Name	Decimal Interest	Interest Type	Pay Code	Owner ISQ	Suspense Description
1080006582 AR MIDLAND LPALLIANCE ROYALTY LLC 2100 ROSS AVE STE 1870 LB-9 DALLAS, TX 75201	0.00060795	RI	SUSPEND	01	DIVISION ORDER NOT SIGNED

THIS AGREEMENT DOES NOT AMEND ANY LEASE OR OPERATING AGREEMENT BETWEEN THE INTEREST OWNERS AND THE LESSEE OR OPERATOR OR ANY OTHER CONTRACTS FOR THE PURCHASE OF OIL OR GAS.

The following provisions apply to each interest owner ("owner") who executes this agreement:

TERMS OF SALE: The undersigned will be paid in accordance with the division of interests set out above. The payor shall pay all parties in accordance with the terms of the oil and gas lease(s).

PAYMENT: From the effective date, after initial payment is made, payment is to be made monthly by payor's check, based on this division of interest not later than 60 days after the end of the calendar month in which oil production is sold and 90 days after the month in which gas is sold from the property listed above, less taxes required by law to be deducted and remitted by payor as purchaser. Payments of less than $100 may be accrued before disbursement until the total amount equals $100 or more, or until 12 months' proceeds accumulate, whichever occurs first. However, the payor may hold accumulated proceeds of less than $10 until production ceases or the payor's responsibility for making payment for production ceases, whichever occurs first. Payee agrees to refund to payor any amounts attributable to an interest or part of an interest that payee does not own.

INDEMNITY: The owner agrees to indemnify and hold payor harmless from all liability resulting from payments made to the owner in accordance with such division of interest, including but not limited to attorney fees or judgments in connection with any suit that affects the owner's interest to which payor is made a party.

DISPUTE; WITHHOLDING OF FUNDS: If a suit is filed that affects the interest of the owner, written notice shall be given to payor by the owner together with a copy of the complaint or petition filed. In the event of a claim or dispute that affects title to the division of interest credited herein, payor is authorized to withhold payments accruing to such interest, without interest unless otherwise required by applicable statute, until the claim or dispute is settled.

TERMINATION: Termination of this agreement is effective on the first day of the month that begins after the 30th day after the date written notice of termination is received by either party.

NOTICES: The owner agrees to notify payor in writing of any change in the division of interest, including changes of interest contingent on payment of money or expiration of time.
No change of interest is binding on payor until the recorded copy of the instrument of change or documents satisfactorily evidencing such change are furnished to payor at the time the change occurs.
Any change of interest shall be made effective on the first day of the month following receipt of such notice by payor.
Any correspondence regarding this agreement shall be furnished to the addresses listed unless otherwise advised by either party.
In addition to the legal rights provided by the terms and provisions of this division order, an owner may have certain statutory rights under the laws of this state.

Owner(s) Signature(s)/Title: _____

Owner(s) SS/Tax ID #: _____

Owner Home Telephone #: _____

Owner Work Telephone #: _____

Owner e-mail address: _____

Failure to furnish your Social Security or Tax I.D. number w
and any tax withheld will n

PLEASE SIGN

AR Midland, LP
BY: Dale Operating Company, as attorney-in-fact
BY: Steve Abney, Co-CEO
TAX ID # 84-2727335
2100 Ross Ave, Suite 1870, LB-9
Dallas, TX 75201
Contact: shaneh@dale-energy.com
Phone: (214) 888-8585

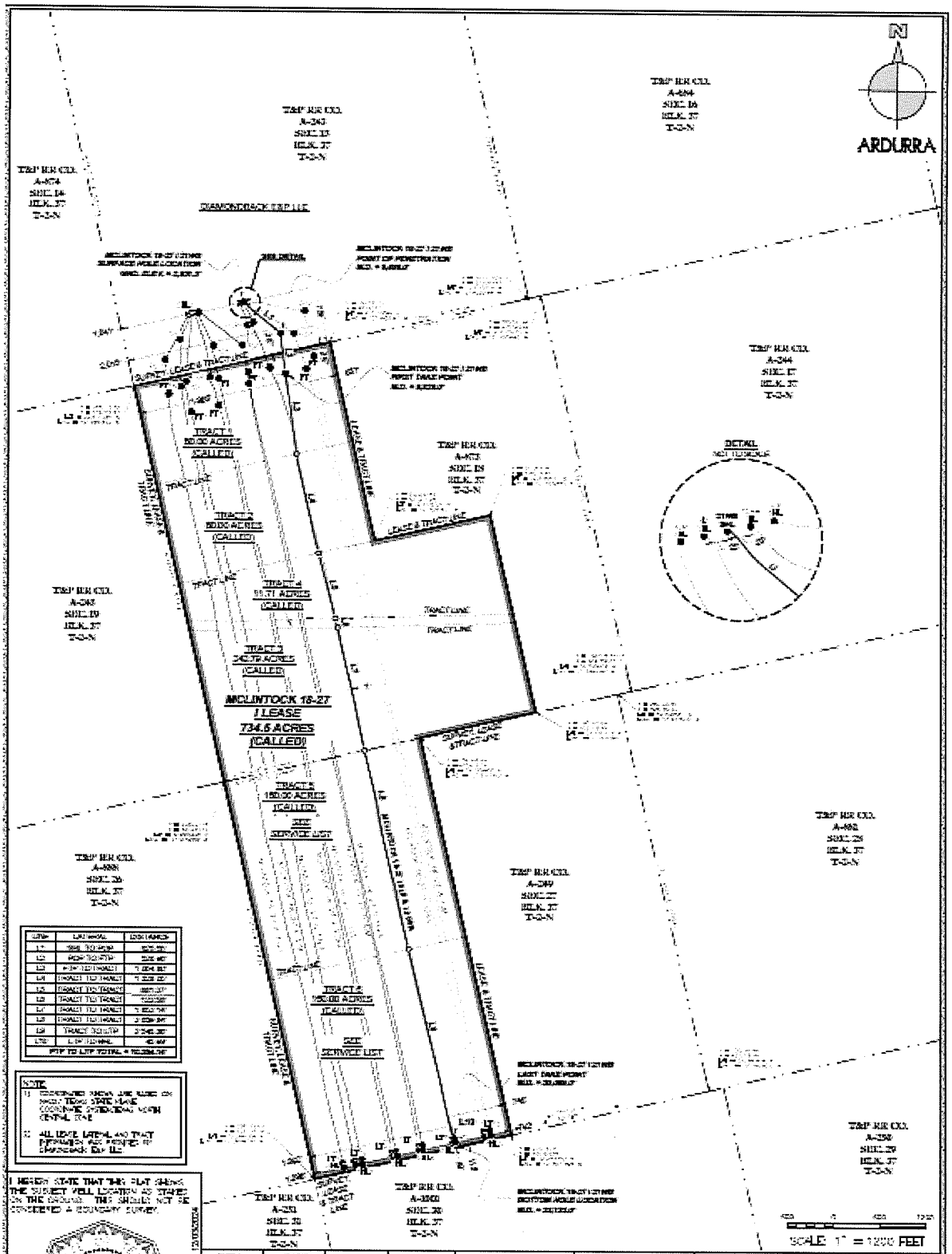
ARDURRA
DIAMONDBACK E&P LLC
MCLINTOCK 18-27
I LEASE
734.6 ACRES
(CALLED)
TRACT 1
TRACT 2
TRACT 3
TRACT 4
TRACT 5
TRACT 6
TRACT 7
TRACT 8
TRACT 9
TRACT 10
TRACT 11
TRACT 12
TRACT 13
TRACT 14
TRACT 15
TRACT 16
TRACT 17
TRACT 18
TRACT 19
TRACT 20
TRACT

DIVISION ORDER

Diamondback E & P LLC ("payor")
900 NW 63rd St., Ste. 200
Oklahoma City, OK 73116

Date: 4/1/2025
Prepared by: LM/SR

Property Number: 108839
Property Name: MCLINTOCK 18-27 I 9LS
Operator: DIAMONDBACK E & P LLC
County and State: MARTIN COUNTY TEXAS
Property Description:

Effective Date: FIRST SALES

Venture Name	MCLINTOCK 18-27 I 9LS (108839)	TRACT	LEGAL DESCRIPTION	ACRES	LATERAL	TPF	PLAT LATERAL
Prospect							
County, St	MARTIN	1	80 acres, more or less, being the N/2 of the West 160 acres of the N/2 of Section 18, Block 37, Township-2-North, Texas & Pacific Railway Company Survey, Abstract No. 873, Martin County.	80.000000	1180.79000	0.11385948	L3
Unit Acres		2	80 acres, more or less, being the S/2 of the West 160 acres of the N/2 of Section 18, Block 37, Township-2-North, Texas & Pacific Railway Company Survey, Abstract No. 873, Martin County.	80.000000	1328.04000	0.12805829	L4
Eff Date	FIRST SALES	3	242.79 acres, more or less, being the West 254.4 acres of the S/2 of Section 18, Block 37, Township-2-North, Texas & Pacific Railway Company Survey, Abstract No. 873, Martin County, Texas, LESS AND EXCEPT 11.71 acres described in a Right-of-Way Deed dated April 1, 1939, recorded in Volume 44, Page 206,	242.790000	2533.26000	0.24427347	L5
Matter No.		4	11.71 acres, more or less, being part of Section 18, Block 37, Township-2-North, Texas & Pacific Railway Company Survey, Abstract No. 873, Martin County, Texas, more particularly described in a Right-of-Way Deed dated April 1, 1939, recorded in Volume 44, Page 206, Martin County Deed Records, from G.T. Hall and wife, Florence Hall, to the State of Texas.	11.710000	122.56000	0.01181804	L6
Landman/DOA		5	160 acres, more or less, being the NW/4 of Section 27, Block 37, Township-2-North, Texas & Pacific Railway Company Survey, Abstract No. 249, Martin County, Texas.	160.000000	2659.99000	0.25649360	L8
Formation	SURFACE TO BASE OF WOLFC/	6	160 acres, more or less, being the SW/4 of Section 27, Block 37, Township-2-North, Texas & Pacific Railway Company Survey, Abstract No. 249, Martin County, Texas.	160.000000	2545.95000	0.24549712	L9
DOTO							
				734.500000	10370.59000	1.00000000	

The undersigned severally and not jointly certifies it is the legal owner of the interest set out below of all the oil and related liquid hydrocarbons and gas and associated hydrocarbons produced from the property described below

Production Oil X Gas X Other X

Owner No/Name	Decimal Interest	Interest Type	Pay Code	Owner ISQ	Suspense Description
1080006582 AR MIDLAND LPALLIANCE ROYALTY LLC 2100 ROSS AVE STE 1870 LB-9 DALLAS, TX 75201	0.00060116	RI	SUSPEND	01	DIVISION ORDER NOT SIGNED

THIS AGREEMENT DOES NOT AMEND ANY LEASE OR OPERATING AGREEMENT BETWEEN THE INTEREST OWNERS AND THE LESSEE OR OPERATOR OR ANY OTHER CONTRACTS FOR THE PURCHASE OF OIL OR GAS.

The following provisions apply to each interest owner ("owner") who executes this agreement:

TERMS OF SALE: The undersigned will be paid in accordance with the division of interests set out above. The payor shall pay all parties in accordance with the terms of the oil and gas lease(s).

PAYMENT: From the effective date, after initial payment is made, payment is to be made monthly by payor's check, based on this division of interest not later than 60 days after the end of the calendar month in which oil production is sold and 90 days after the month in which gas is sold from the property listed above, less taxes required by law to be deducted and remitted by payor as purchaser. Payments of less than $100 may be accrued before disbursement until the total amount equals $100 or more, or until 12 months' proceeds accumulate, whichever occurs first. However, the payor may hold accumulated proceeds of less than $10 until production ceases or the payor's responsibility for making payment for production ceases, whichever occurs first. Payee agrees to refund to payor any amounts attributable to an interest or part of an interest that payee does not own.

INDEMNITY: The owner agrees to indemnify and hold payor harmless from all liability resulting from payments made to the owner in accordance with such division of interest, including but not limited to attorney fees or judgments in connection with any suit that affects the owner's interest to which payor is made a party.

DISPUTE; WITHHOLDING OF FUNDS: If a suit is filed that affects the interest of the owner, written notice shall be given to payor by the owner together with a copy of the complaint or petition filed. In the event of a claim or dispute that affects title to the division of interest credited herein, payor is authorized to withhold payments accruing to such interest, without interest unless otherwise required by applicable statute, until the claim or dispute is settled.

TERMINATION: Termination of this agreement is effective on the first day of the month that begins after the 30th day after the date written notice of termination is received by either party.

NOTICES: The owner agrees to notify payor in writing of any change in the division of interest, including changes of interest contingent on payment of money or expiration of time.
No change of interest is binding on payor until the recorded copy of the instrument of change or documents satisfactorily evidencing such change are furnished to payor at the time the change occurs.
Any change of interest shall be made effective on the first day of the month following receipt of such notice by payor.
Any correspondence regarding this agreement shall be furnished to the addresses listed unless otherwise advised by either party.
In addition to the legal rights provided by the terms and provisions of this division order, an owner may have certain statutory rights under the laws of this state.

Owner(s) Signature(s)/Title: _____

Owner(s) SS/Tax ID #: _____

Owner Home Telephone #: _____

Owner Work Telephone #: _____

Owner e-mail address: _____

Failure to furnish your Social Security or Tax I.D. number wil
and any tax withheld will not

PLEASE SIGN A

AR Midland, LP
BY: Dale Operating Company, as attorney-in-fact
BY: Steve Abney, Co-CEO
TAX ID # 84-2727335
2100 Ross Ave, Suite 1870, LB-9
Dallas, TX 75201
Contact: shaneh@dale-energy.com
Phone: (214) 888-8588

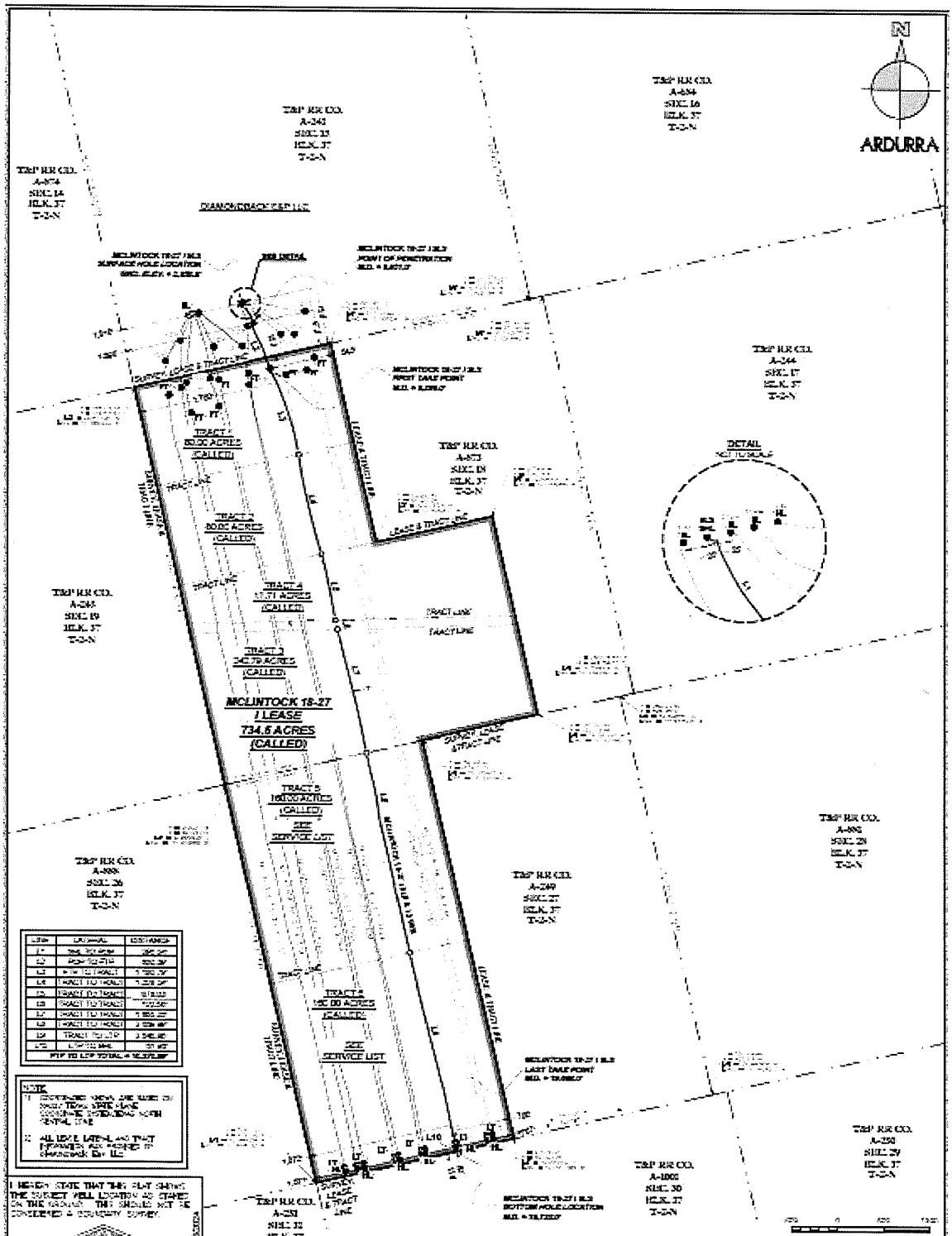

LINE	DISTANCE
L1	[illegible]
L2	[illegible]
L3	[illegible]
L4	[illegible]
L5	[illegible]
L6	[illegible]
L7	[illegible]
L8	[illegible]
L9	[illegible]
L10	[illegible]
PTP TO LTP TOTAL = [illegible]	

NOTE:
1) [illegible]
2) ALL LEASE LINES AND TRACT [illegible] DIAMONDBACK E&P LLC

I HEREBY STATE THAT THIS PLAT SHOWS THE SURVEY WELL LOCATION AS STAKED ON THE GROUND. THIS SHOULD NOT BE CONSIDERED A BOUNDARY SURVEY.

SERGIO J. CANALES
REGISTERED PROFESSIONAL LAND SURVEYOR
LICENSE NO. [illegible]

WELL NUMBER	LEASE CALLS	SURVEY CALLS	MEASURED DEPTH	NAD27 TEXAS STATE PLANE COORDINATES	NAD27 GEOGRAPHIC COORDINATES(DMS)	NAD27 GEOGRAPHIC COORDINATES(DD)	NAD83 GEOGRAPHIC COORDINATES(DD)
1 9LS SHL	OFF LEASE 750 FSL	1,617 FWL 750 FSL	- - -	Y = [illegible] X = [illegible]	LAT. = [illegible] N LONG. = [illegible] W	LAT. = [illegible] N LONG. = [illegible] W	LAT. = [illegible] N LONG. = [illegible] W
1 9LS POP	OFF LEASE 472 FSL	1,696 FWL 472 FSL	[illegible]	Y = [illegible] X = [illegible]	LAT. = [illegible] N LONG. = [illegible] W	LAT. = [illegible] N LONG. = [illegible] W	LAT. = [illegible] N LONG. = [illegible] W
1 9LS FTP	343 FSL 153 FNL	1,700 FWL 153 FNL	[illegible]	Y = [illegible] X = [illegible]	LAT. = [illegible] N LONG. = [illegible] W	LAT. = [illegible] N LONG. = [illegible] W	LAT. = [illegible] N LONG. = [illegible] W
1 9LS LTP	700 FSL 114 FSL	1,672 FWL 114 FSL	[illegible]	Y = [illegible] X = [illegible]	LAT. = [illegible] N LONG. = [illegible] W	LAT. = [illegible] N LONG. = [illegible] W	LAT. = [illegible] N LONG. = [illegible] W
1 9LS BHL	700 FSL 67 FSL	1,671 FWL 67 FSL	[illegible]	Y = [illegible] X = [illegible]	LAT. = [illegible] N LONG. = [illegible] W	LAT. = [illegible] N LONG. = [illegible] W	LAT. = [illegible] N LONG. = [illegible] W

ARDURRA

AN AS-DRILLED PLAT FOR:
DIAMONDBACK E&P LLC
MCLINTOCK 18-27 I 9LS
SITUATED IN THE T&P RR CO. SURVEYS, SEC. 18, A-873
AND SEC. 27, A-249, ALL BEING OUT OF BLOCK 37, T-2-N

[illegible]	[illegible]
[illegible]	[illegible]
[illegible]	[illegible]
[illegible]	[illegible]

DIVISION ORDER

Diamondback E & P LLC ("payor")
900 NW 63rd St., Ste. 200
Oklahoma City, OK 73116

Date: 4/1/2025
Prepared by: LM/SR

Property Number: 108841
Property Name: MCLINTOCK 18-27 O 15WA
Operator: DIAMONDBACK E & P LLC
County and State: MARTIN COUNTY TEXAS
Property Description:

Effective Date: FIRST SALES

Venture Name	MCLINTOCK 18-27 O 15WA (108841)	TRACT	LEGAL DESCRIPTION	ACRES	LATERAL	TPF	PLAT LATERAL
Prospect							
County, St	MARTIN	1	80 acres, more or less, being the N/2 of the West 160 acres of the N/2 of Section 18, Block 37, Township-2-North, Texas & Pacific Railway Company Survey, Abstract No. 873, Martin County, Texas.	80.000000	1061.64000	0.10356908	L3
Unit Acres		2	80 acres, more or less, being the S/2 of the West 160 acres of the N/2 of Section 18, Block 37, Township-2-North, Texas & Pacific Railway Company Survey, Abstract No. 873, Martin County, Texas.	80.000000	1327.96000	0.12955012	L4
Eff Date	FIRST SALES	3	242.79 acres, more or less, being the West 254.4 acres of the S/2 of Section 18, Block 37, Township-2-North, Texas & Pacific Railway Company Survey, Abstract No. 873, Martin County, Texas, LESS AND EXCEPT 11.71 acres described in a Right-of-Way Deed dated April 1, 1939, recorded in Volume 44, Page 206, Martin	242.790000	2532.62000	0.24707162	L5
Matter No.		4	11.71 acres, more or less, being part of Section 18, Block 37, Township-2-North, Texas & Pacific Railway Company Survey, Abstract No. 873, Martin County, Texas, more particularly described in a Right-of-Way Deed dated April 1, 1939, recorded in Volume 44, Page 206, Martin County Deed Records, from G.T. Hall and wife, Florence Hall, to the State of Texas.	11.710000	122.92000	0.01199155	L6
Landman/DOA		5	160 acres, more or less, being the NW/4 of Section 27, Block 37, Township-2-North, Texas & Pacific Railway Company Survey, Abstract No. 249, Martin County, Texas.	160.000000	2660.17000	0.25951486	L8
Formation	SURFACE TO BASE OF WOLFCAMP	6	160 acres, more or less, being the SW/4 of Section 27, Block 37, Township-2-North, Texas & Pacific Railway Company Survey, Abstract No. 249, Martin County, Texas.	160.000000	2545.24000	0.24830277	L9
DOTO							
				734.500000	10250.55000	1.00000000	

The undersigned severally and not jointly certifies it is the legal owner of the interest set out below of all the oil and related liquid hydrocarbons and gas and associated hydrocarbons produced from the property described below

Production Oil X Gas X Other X

Owner No/Name	Decimal Interest	Interest Type	Pay Code	Owner ISQ	Suspense Description
1080006582 AR MIDLAND LPALLIANCE ROYALTY LLC 2100 ROSS AVE STE 1870 LB-9 DALLAS, TX 75201	0.00060824	RI	SUSPEND	01	DIVISION ORDER NOT SIGNED

THIS AGREEMENT DOES NOT AMEND ANY LEASE OR OPERATING AGREEMENT BETWEEN THE INTEREST OWNERS AND THE LESSEE OR OPERATOR OR ANY OTHER CONTRACTS FOR THE PURCHASE OF OIL OR GAS.

The following provisions apply to each interest owner ("owner") who executes this agreement:

TERMS OF SALE: The undersigned will be paid in accordance with the division of interests set out above. The payor shall pay all parties in accordance with the terms of the oil and gas lease(s).

PAYMENT: From the effective date, after initial payment is made, payment is to be made monthly by payor's check, based on this division of interest not later than 60 days after the end of the calendar month in which oil production is sold and 90 days after the month in which gas is sold from the property listed above, less taxes required by law to be deducted and remitted by payor as purchaser. Payments of less than $100 may be accrued before disbursement until the total amount equals $100 or more, or until 12 months' proceeds accumulate, whichever occurs first. However, the payor may hold accumulated proceeds of less than $10 until production ceases or the payor's responsibility for making payment for production ceases, whichever occurs first. Payee agrees to refund to payor any amounts attributable to an interest or part of an interest that payee does not own.

INDEMNITY: The owner agrees to indemnify and hold payor harmless from all liability resulting from payments made to the owner in accordance with such division of interest, including but not limited to attorney fees or judgments in connection with any suit that affects the owner's interest to which payor is made a party.

DISPUTE; WITHHOLDING OF FUNDS: If a suit is filed that affects the interest of the owner, written notice shall be given to payor by the owner together with a copy of the complaint or petition filed. In the event of a claim or dispute that affects title to the division of interest credited herein, payor is authorized to withhold payments accruing to such interest, without interest unless otherwise required by applicable statute, until the claim or dispute is settled.

TERMINATION: Termination of this agreement is effective on the first day of the month that begins after the 30th day after the date written notice of termination is received by either party.

NOTICES: The owner agrees to notify payor in writing of any change in the division of interest, including changes of interest contingent on payment of money or expiration of time.
No change of interest is binding on payor until the recorded copy of the instrument of change or documents satisfactorily evidencing such change are furnished to payor at the time the change occurs.
Any change of interest shall be made effective on the first day of the month following receipt of such notice by payor.
Any correspondence regarding this agreement shall be furnished to the addresses listed unless otherwise advised by either party.
In addition to the legal rights provided by the terms and provisions of this division order, an owner may have certain statutory rights under the laws of this state.

Owner(s) Signature(s)/Title: _____

Owner(s) SS/Tax ID #: _____

Owner Home Telephone #: _____

Owner Work Telephone #: _____

Owner e-mail address: _____

Failure to furnish your Social Security or Tax I.D. number w
and any tax withheld will n

PLEASE SIGN

AR Midland, LP
BY: Dale Operating Company, as attorney-in-fact
BY: Steve Abney, Co-CEO
TAX ID # 84-2727335
2100 Ross Ave, Suite 1870, LB-9
Dallas, TX 75201
Contact: shaneh@dale-energy.com
Phone: (214) 888-8588

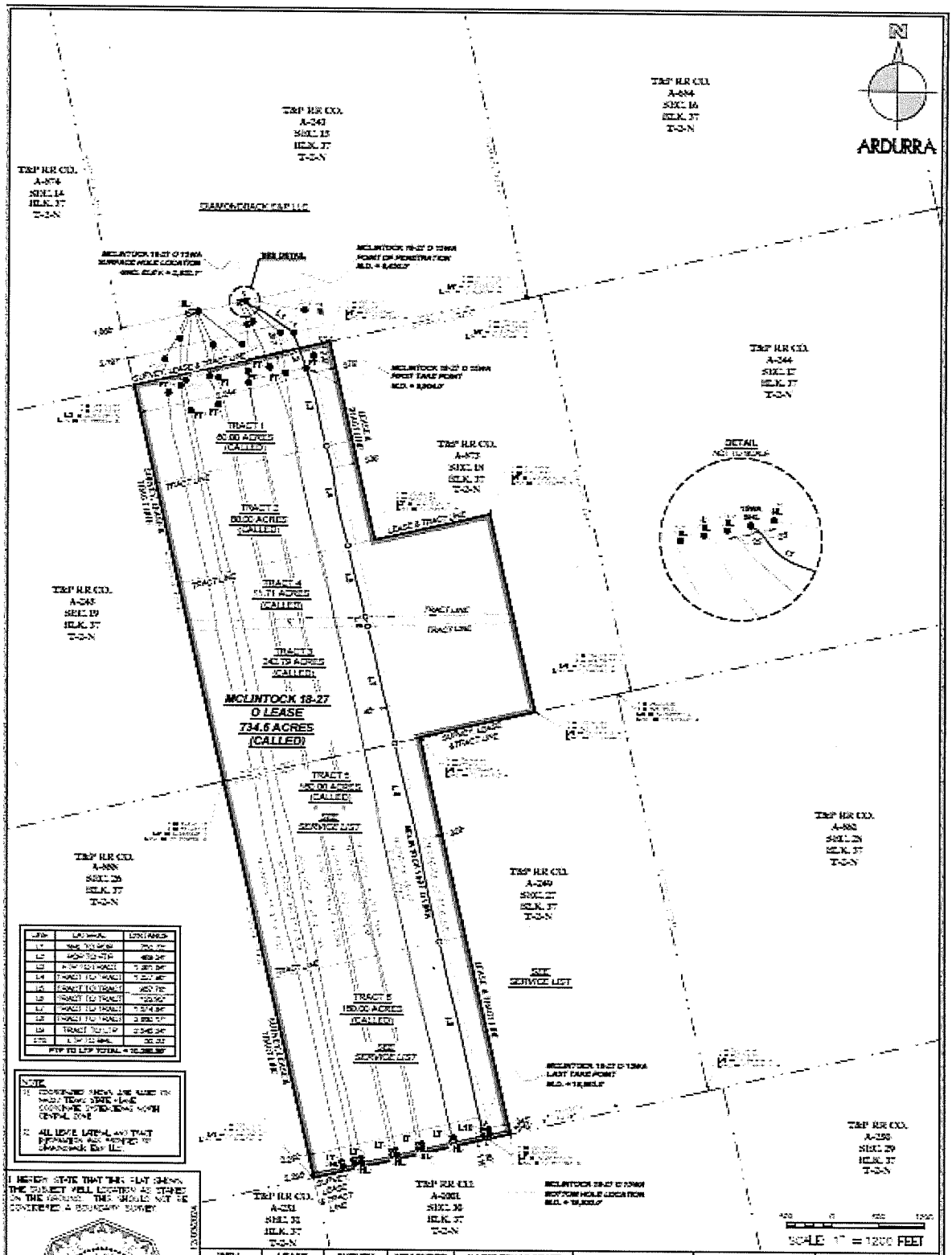

LINE	LAT/AZIMUTH	LENGTH/ANGLE
L1	[illegible]	[illegible]
L2	[illegible]	[illegible]
L3	[illegible]	[illegible]
L4	[illegible]	[illegible]
L5	[illegible]	[illegible]
L6	[illegible]	[illegible]
L7	[illegible]	[illegible]
L8	[illegible]	[illegible]
L9	[illegible]	[illegible]
L10	[illegible]	[illegible]
FTP TO LTP TOTAL = [illegible]		

NOTE

1) COORDINATES SHOWN ARE BASED ON NAD27 TEXAS STATE PLANE COORDINATE SYSTEM, NORTH CENTRAL ZONE

2) ALL LEASE LATERAL AND TRACT DISTANCES ARE MEASURED BY DIAMONDBACK E&P LLC.

I HEREBY STATE THAT THIS PLAT SHOWS THE SURVEYED WELL LOCATION AS STAKED ON THE GROUND. THIS SHOULD NOT BE CONSIDERED A BOUNDARY SURVEY.

SERGIO J. CANALES
REGISTERED PROFESSIONAL LAND SURVEYOR
LICENSE NO. [illegible]

BOTTOM HOLE LOCATION

WELL NUMBER	LEASE CALLS	SURVEY CALLS	MEASURED DEPTH	NAD27 TEXAS STATE PLANE COORDINATES	NAD27 GEOGRAPHIC COORDINATES(DMS)	NAD27 GEOGRAPHIC COORDINATES(DD)	NAD83 GEOGRAPHIC COORDINATES(DD)
O 15WA BHL	OFF LEASE 1500 FNL 1500 FEL	1,600' FWL 1500' FSL	- - -	Y = [illegible] X = [illegible]	LAT. = [illegible] N LONG. = [illegible] W	LAT. = [illegible] N LONG. = [illegible] W	LAT. = [illegible] N LONG. = [illegible] W
O 15WA POP	OFF LEASE 220 FSL	2,191' FWL 220' FSL	[illegible]	Y = [illegible] X = [illegible]	LAT. = [illegible] N LONG. = [illegible] W	LAT. = [illegible] N LONG. = [illegible] W	LAT. = [illegible] N LONG. = [illegible] W
O 15WA FTP	330 FSL 367 FWL	2,344 FWL 367 FSL	[illegible]	Y = [illegible] X = [illegible]	LAT. = [illegible] N LONG. = [illegible] W	LAT. = [illegible] N LONG. = [illegible] W	LAT. = [illegible] N LONG. = [illegible] W
O 15WA LTP	347 FEL 115 FSL	2,597 FWL 115 FSL	[illegible]	Y = [illegible] X = [illegible]	LAT. = [illegible] N LONG. = [illegible] W	LAT. = [illegible] N LONG. = [illegible] W	LAT. = [illegible] N LONG. = [illegible] W
O 15WA BHL	347 FEL 60 FSL	2,597 FWL 60 FSL	[illegible]	Y = [illegible] X = [illegible]	LAT. = [illegible] N LONG. = [illegible] W	LAT. = [illegible] N LONG. = [illegible] W	LAT. = [illegible] N LONG. = [illegible] W

ARDURRA

AN AS-DRILLED PLAT FOR
DIAMONDBACK E&P LLC
MCLINTOCK 18-27 O 15WA
SITUATED IN THE T&P RR CO. SURVEY, SEC. 15, A-243
SEC. 15 [illegible] & SEC. 27 [illegible] ALL BEING A PART OF BLOCK 37, T-2-N

DATE OF SURVEY: [illegible]
DRAWN BY: [illegible]
FILE #: [illegible]
DRAWING #: [illegible]

DIVISION ORDER

Diamondback E & P LLC ("payor")
900 NW 63rd St., Ste. 200
Oklahoma City, OK 73116

Date: 4/1/2025
Prepared by: LM/SR

Property Number: 108917
Property Name: MCLINTOCK 18-27 A 1JM
Operator: DIAMONDBACK E & P LLC
County and State: MARTIN COUNTY TEXAS
Property Description:

Effective Date: FIRST SALES

Venture Name	MCLINTOCK 18-27 A 1JM (108917)	TRACT	LEGAL DESCRIPTION	ACRES	LATERAL	TPF	PLAT LATERAL
Prospect							
County, St	MARTIN	1	80 acres, more or less, being the N/2 of the West 160 acres of the N/2 of Section 18, Block 37, Township-2-North, Texas & Pacific Railway Company Survey, Abstract No. 873, Martin County,	80.000000	1193.09000	0.11497313	L3
Unit Acres		2	80 acres, more or less, being the S/2 of the West 160 acres of the N/2 of Section 18, Block 37, Township-2-North, Texas & Pacific Railway Company Survey, Abstract No. 873, Martin County,	80.000000	1328.11000	0.12798445	L4
Eff Date	FIRST SALES	3	242.73 acres, more or less, being the West 254.4 acres of the S/2 of Section 18, Block 37, Township-2-North, Texas & Pacific Railway Company Survey, Abstract No. 873, Martin County, Texas, LESS AND EXCEPT 11.71 acres described in a Right-of-Way Deed dated April 1, 1939, recorded in Volume 44, Page 206,	242.730000	2533.50000	0.24414288	L5
Matter No.		4	11.71 acres, more or less, being part of Section 18, Block 37, Township-2-North, Texas & Pacific Railway Company Survey, Abstract No. 873, Martin County, Texas, more particularly described in a Right-of-Way Deed dated April 1, 1939, recorded in Volume 44, Page 206, Martin County Deed Records, from G.T. Hall and wife, Florence Hall, to the State of Texas.	11.710000	121.84000	0.01174122	L6
Landman/DOA		5	160 acres, more or less, being the NW/4 of Section 27, Block 37, Township-2-North, Texas & Pacific Railway Company Survey, Abstract No. 249, Martin County, Texas.	160.000000	2660.24000	0.25635629	L8
Formation	SURFACE TO BASE OF WOLFC	6	160 acres, more or less, being the SW/4 of Section 27, Block 37, Township-2-North, Texas & Pacific Railway Company Survey, Abstract No. 249, Martin County, Texas.	160.000000	2540.34000	0.24480203	L9
DOTO							
				734.500000	10377.12000	1.00000000	

The undersigned severally and not jointly certifies it is the legal owner of the interest set out below of all the oil and related liquid hydrocarbons and gas and associated hydrocarbons produced from the property described below

Production Oil X Gas X Other X

Owner No/Name	Decimal Interest	Interest Type	Pay Code	Owner ISQ	Suspense Description
1080006582 AR MIDLAND LPALLIANCE ROYALTY LLC 2100 ROSS AVE STE 1870 LB-9 DALLAS, TX 75201	0.00060084	RI	SUSPEND	01	DIVISION ORDER NOT SIGNED

THIS AGREEMENT DOES NOT AMEND ANY LEASE OR OPERATING AGREEMENT BETWEEN THE INTEREST OWNERS AND THE LESSEE OR OPERATOR OR ANY OTHER CONTRACTS FOR THE PURCHASE OF OIL OR GAS.

The following provisions apply to each interest owner ("owner") who executes this agreement:

TERMS OF SALE: The undersigned will be paid in accordance with the division of interests set out above. The payor shall pay all parties in accordance with the terms of the oil and gas lease(s).

PAYMENT: From the effective date, after initial payment is made, payment is to be made monthly by payor's check, based on this division of interest not later than 60 days after the end of the calendar month in which oil production is sold and 90 days after the month in which gas is sold from the property listed above, less taxes required by law to be deducted and remitted by payor as purchaser. Payments of less than $100 may be accrued before disbursement until the total amount equals $100 or more, or until 12 months' proceeds accumulate, whichever occurs first. However, the payor may hold accumulated proceeds of less than $10 until production ceases or the payor's responsibility for making payment for production ceases, whichever occurs first. Payee agrees to refund to payor any amounts attributable to an interest or part of an interest that payee does not own.

INDEMNITY: The owner agrees to indemnify and hold payor harmless from all liability resulting from payments made to the owner in accordance with such division of interest, including but not limited to attorney fees or judgments in connection with any suit that affects the owner's interest to which payor is made a party.

DISPUTE; WITHHOLDING OF FUNDS: If a suit is filed that affects the interest of the owner, written notice shall be given to payor by the owner together with a copy of the complaint or petition filed. In the event of a claim or dispute that affects title to the division of interest credited herein, payor is authorized to withhold payments accruing to such interest, without interest unless otherwise required by applicable statute, until the claim or dispute is settled.

TERMINATION: Termination of this agreement is effective on the first day of the month that begins after the 30th day after the date written notice of termination is received by either party.

NOTICES: The owner agrees to notify payor in writing of any change in the division of interest, including changes of interest contingent on payment of money or expiration of time.
No change of interest is binding on payor until the recorded copy of the instrument of change or documents satisfactorily evidencing such change are furnished to payor at the time the change occurs.
Any change of interest shall be made effective on the first day of the month following receipt of such notice by payor.
Any correspondence regarding this agreement shall be furnished to the addresses listed unless otherwise advised by either party.
In addition to the legal rights provided by the terms and provisions of this division order, an owner may have certain statutory rights under the laws of this state.

Owner(s) Signature(s)/Title: _____

Owner(s) SS/Tax ID #: _____

Owner Home Telephone #: _____

Owner Work Telephone #: _____

Owner e-mail address: _____

Failure to furnish your Social Security or Tax I.D. number will
and any tax withheld will not

PLEASE SIGN A

AR Midland, LP
BY: Dale Operating Company, as attorney-in-fact
BY: Steve Abney, Co-CEO
TAX ID # 84-2727335
2100 Ross Ave, Suite 1870, LB-9
Dallas, TX 75201
Contact: shaneh@dale-energy.com
Phone: (214) 888-8588

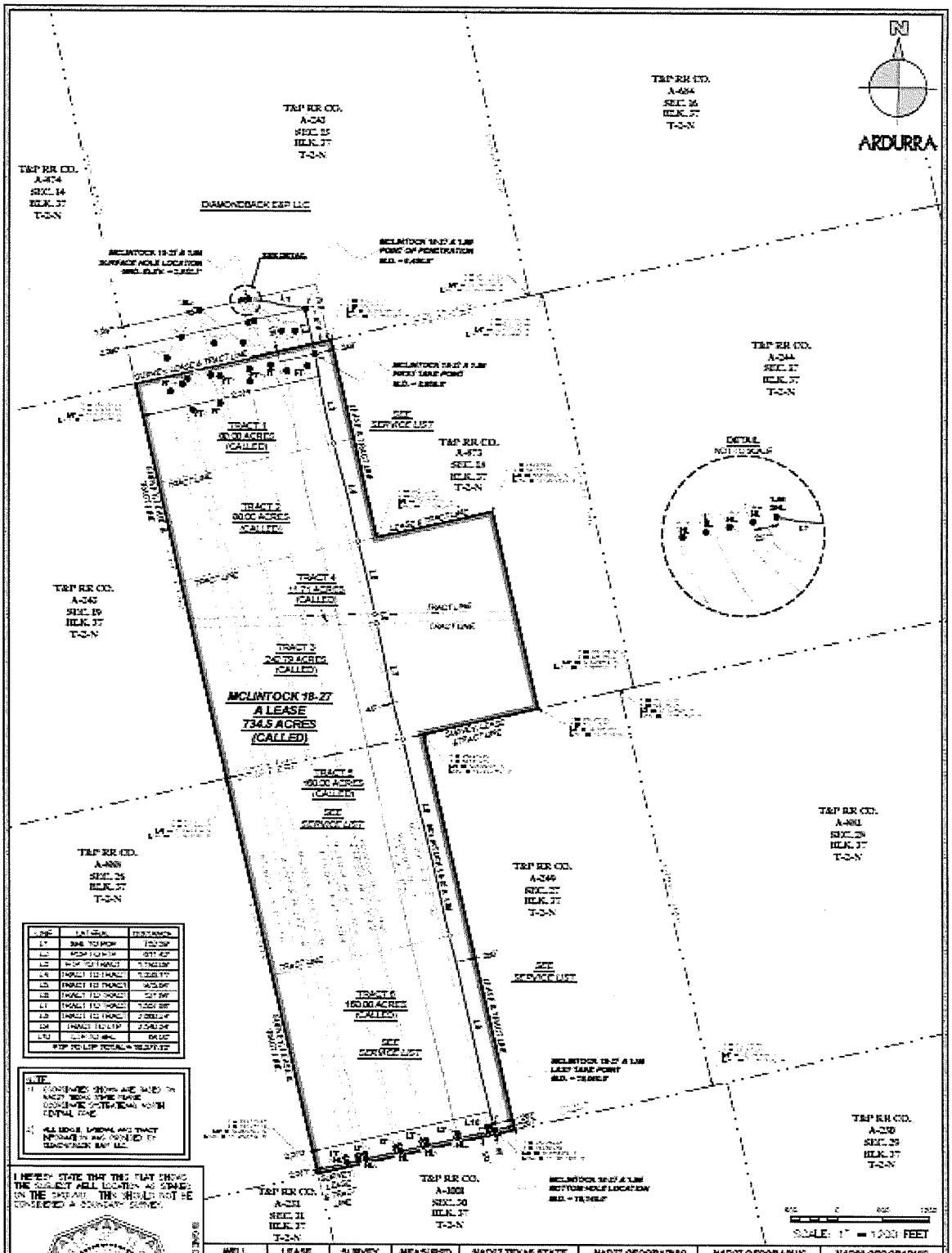

LINE	LATERAL	DISTANCE
L1	SHL TO POP	152.29'
L2	POP TO FTP	977.42'
L3	POP TO TRACT	1,116.19'
L4	TRACT TO TRACT	1,326.17'
L5	TRACT TO TRACT	1,326.17'
L6	TRACT TO TRACT	1,326.17'
L7	TRACT TO TRACT	1,326.17'
L8	TRACT TO TRACT	1,326.17'
L9	TRACT TO TRACT	1,326.17'
L10	LTP TO BHL	64.00'
* FTP TO LTP TOTAL = 18,375.12'		

NOTE:
1) COORDINATES SHOWN ARE BASED ON NAD27 TEXAS STATE PLANE COORDINATE SYSTEM NORTH CENTRAL ZONE.
2) ALL LEASE, DRILL AND TRACT INFORMATION WAS PROVIDED BY DIAMONDBACK E&P LLC.

I HEREBY STATE THAT THIS PLAT SHOWS THE SUBJECT WELL LOCATION AS STAKED ON THE GROUND. THIS SHOULD NOT BE CONSIDERED A BOUNDARY SURVEY.

SERGIO F. GONZALEZ
REGISTERED PROFESSIONAL LAND SURVEYOR
LICENSE NO. 5341

WELL NUMBER	LEASE CALLS	SURVEY CALLS	MEASURED DEPTH	NAD27 TEXAS STATE PLANE COORDINATES	NAD27 GEOGRAPHIC COORDINATES(DMS)	NAD27 GEOGRAPHIC COORDINATES(DD)	NAD83 GEOGRAPHIC COORDINATES(DD)
A 1JM SHL	OFF LEASE 756 FSL	1,086' FWL 756 FSL	- - -	Y = [illegible] X = [illegible]	LAT. = [illegible] N LONG. = [illegible] W	LAT. = [illegible] N LONG. = [illegible] W	LAT. = [illegible] N LONG. = [illegible] W
A 1JM POP	OFF LEASE 476 FSL	2,340' FWL 476 FSL	[illegible]	Y = [illegible] X = [illegible]	LAT. = [illegible] N LONG. = [illegible] W	LAT. = [illegible] N LONG. = [illegible] W	LAT. = [illegible] N LONG. = [illegible] W
A 1JM FTP	2[illegible] FSL 1,[illegible] FSL	2,374' FWL 1,[illegible] FSL	[illegible]	Y = [illegible] X = [illegible]	LAT. = [illegible] N LONG. = [illegible] W	LAT. = [illegible] N LONG. = [illegible] W	LAT. = [illegible] N LONG. = [illegible] W
A 1JM LTP	2[illegible] FSL 120 FSL	2,374' FWL 120 FSL	19,[illegible]	Y = [illegible] X = [illegible]	LAT. = [illegible] N LONG. = [illegible] W	LAT. = [illegible] N LONG. = [illegible] W	LAT. = [illegible] N LONG. = [illegible] W
A 1JM BHL	2[illegible] FSL 56 FSL	2,374' FWL 56 FSL	19,[illegible]	Y = [illegible] X = [illegible]	LAT. = [illegible] N LONG. = [illegible] W	LAT. = [illegible] N LONG. = [illegible] W	LAT. = [illegible] N LONG. = [illegible] W

ARDURRA

AN AS-DRILLED PLAT FOR
DIAMONDBACK E&P LLC
MCLINTOCK 18-27 A 1JM
SITUATED IN THE T&P RR CO. SURVEYS SEC. 18, A-243, SEC. 19, A-243, AND SEC. 20, A-249, ALL BEING OUT OF BLOCK 37, T-2-N
APPROXIMATELY 16.5 MILES NORTHWEST OF STANTON IN MARTIN COUNTY, TEXAS

SCALE: [illegible]
DATE: [illegible]
DR. BY: [illegible]
CHK. BY: [illegible]
J. #: [illegible]

PLOT DATE: [illegible]

DIVISION ORDER

Diamondback E & P LLC ("payor")
900 NW 63rd St., Ste. 200
Oklahoma City, OK 73116

Date: 4/1/2025
Prepared by: LM/SR

Property Number: 108930
Property Name: MCLINTOCK 18-27 D 4JM
Operator: DIAMONDBACK E & P LLC
County and State: MARTIN COUNTY TEXAS
Property Description:

Effective Date: FIRST SALES

Venture Name	MCLINTOCK 18-27 D 4JM (108930)	TRACT	LEGAL DESCRIPTION	ACRES	LATERAL	TPF	PLAT LATERAL
Prospect							
County, St	MARTIN	1	80 acres, more or less, being the N/2 of the West 160 acres of the N/2 of Section 18, Block 37, Township-2-North, Texas & Pacific Railway Company Survey, Abstract No. 873, Martin County, Texas.	80.000000	1187.68000	0.11446293	L3
Unit Acres		2	80 acres, more or less, being the S/2 of the West 160 acres of the N/2 of Section 18, Block 37, Township-2-North, Texas & Pacific Railway Company Survey, Abstract No. 873, Martin County, Texas.	80.000000	1328.19000	0.12800462	L4
Eff Date	FIRST SALES	3	242.79 acres, more or less, being the West 254.4 acres of the S/2 of Section 18, Block 37, Township-2-North, Texas & Pacific Railway Company Survey, Abstract No. 873, Martin County, Texas, LESS AND EXCEPT 11.71 acres described in a Right-of-Way Deed dated April 1, 1939, recorded in Volume 44, Page 206, Martin	242.790000	2533.69000	0.24418456	L5
Matter No.		4	11.71 acres, more or less, being part of Section 18, Block 37, Township-2-North, Texas & Pacific Railway Company Survey, Abstract No. 873, Martin County, Texas, more particularly described in a Right-of-Way Deed dated April 1, 1939, recorded in Volume 44, Page 206, Martin County Deed Records, from G.T. Hall and wife, Florence Hall, to the State of Texas.	11.710000	122.34000	0.01179055	L6
Landman/DOA		5	160 acres, more or less, being the NW/4 of Section 27, Block 37, Township-2-North, Texas & Pacific Railway Company Survey, Abstract No. 249, Martin County, Texas.	160.000000	2659.42000	0.25630222	L8
Formation	SURFACE TO BASE OF WOLFCAMP	6	160 acres, more or less, being the SW/4 of Section 27, Block 37, Township-2-North, Texas & Pacific Railway Company Survey, Abstract No. 249, Martin County, Texas.	160.000000	2544.79000	0.24525472	L9
DOTD							
				734.500000	10376.11000	1.00000000	

The undersigned severally and not jointly certifies it is the legal owner of the interest set out below of all the oil and related liquid hydrocarbons and gas and associated hydrocarbons produced from the property described below

Production Oil X Gas X Other X

Owner No/Name	Decimal Interest	Interest Type	Pay Code	Owner ISQ	Suspense Description
1080006582 AR MIDLAND LPALLIANCE ROYALTY LLC 2100 ROSS AVE STE 1870 LB-9 DALLAS, TX 75201	0.00060071	RI	SUSPEND	01	DIVISION ORDER NOT SIGNED

THIS AGREEMENT DOES NOT AMEND ANY LEASE OR OPERATING AGREEMENT BETWEEN THE INTEREST OWNERS AND THE LESSEE OR OPERATOR OR ANY OTHER CONTRACTS FOR THE PURCHASE OF OIL OR GAS.

The following provisions apply to each interest owner ("owner") who executes this agreement:

TERMS OF SALE: The undersigned will be paid in accordance with the division of interests set out above. The payor shall pay all parties in accordance with the terms of the oil and gas lease(s).

PAYMENT: From the effective date, after initial payment is made, payment is to be made monthly by payor's check, based on this division of interest not later than 60 days after the end of the calendar month in which oil production is sold and 90 days after the month in which gas is sold from the property listed above, less taxes required by law to be deducted and remitted by payor as purchaser. Payments of less than $100 may be accrued before disbursement until the total amount equals $100 or more, or until 12 months' proceeds accumulate, whichever occurs first. However, the payor may hold accumulated proceeds of less than $10 until production ceases or the payor's responsibility for making payment for production ceases, whichever occurs first. Payee agrees to refund to payor any amounts attributable to an interest or part of an interest that payee does not own.

INDEMNITY: The owner agrees to indemnify and hold payor harmless from all liability resulting from payments made to the owner in accordance with such division of interest, including but not limited to attorney fees or judgments in connection with any suit that affects the owner's interest to which payor is made a party.

DISPUTE; WITHHOLDING OF FUNDS: If a suit is filed that affects the interest of the owner, written notice shall be given to payor by the owner together with a copy of the complaint or petition filed. In the event of a claim or dispute that affects title to the division of interest credited herein, payor is authorized to withhold payments accruing to such interest, without interest unless otherwise required by applicable statute, until the claim or dispute is settled.

TERMINATION: Termination of this agreement is effective on the first day of the month that begins after the 30th day after the date written notice of termination is received by either party.

NOTICES: The owner agrees to notify payor in writing of any change in the division of interest, including changes of interest contingent on payment of money or expiration of time.
No change of interest is binding on payor until the recorded copy of the instrument of change or documents satisfactorily evidencing such change are furnished to payor at the time the change occurs.
Any change of interest shall be made effective on the first day of the month following receipt of such notice by payor.
Any correspondence regarding this agreement shall be furnished to the addresses listed unless otherwise advised by either party.
In addition to the legal rights provided by the terms and provisions of this division order, an owner may have certain statutory rights under the laws of this state.

Owner(s) Signature(s)/Title: _____

Owner(s) SS/Tax ID #: _____

Owner Home Telephone #: _____

Owner Work Telephone #: _____

Owner e-mail address: _____

Failure to furnish your Social Security or Tax I.D. number wil
and any tax withheld will no

PLEASE SIGN A

AR Midland, LP
BY: Dale Operating Company, as attorney-in-fact
BY: Steve Abney, Co-CEO
TAX ID # 84-2727335
2100 Ross Ave, Suite 1870, LB-9
Dallas, TX 75201
Contact: shaneh@dale-energy.com
Phone: (214) 888-8588

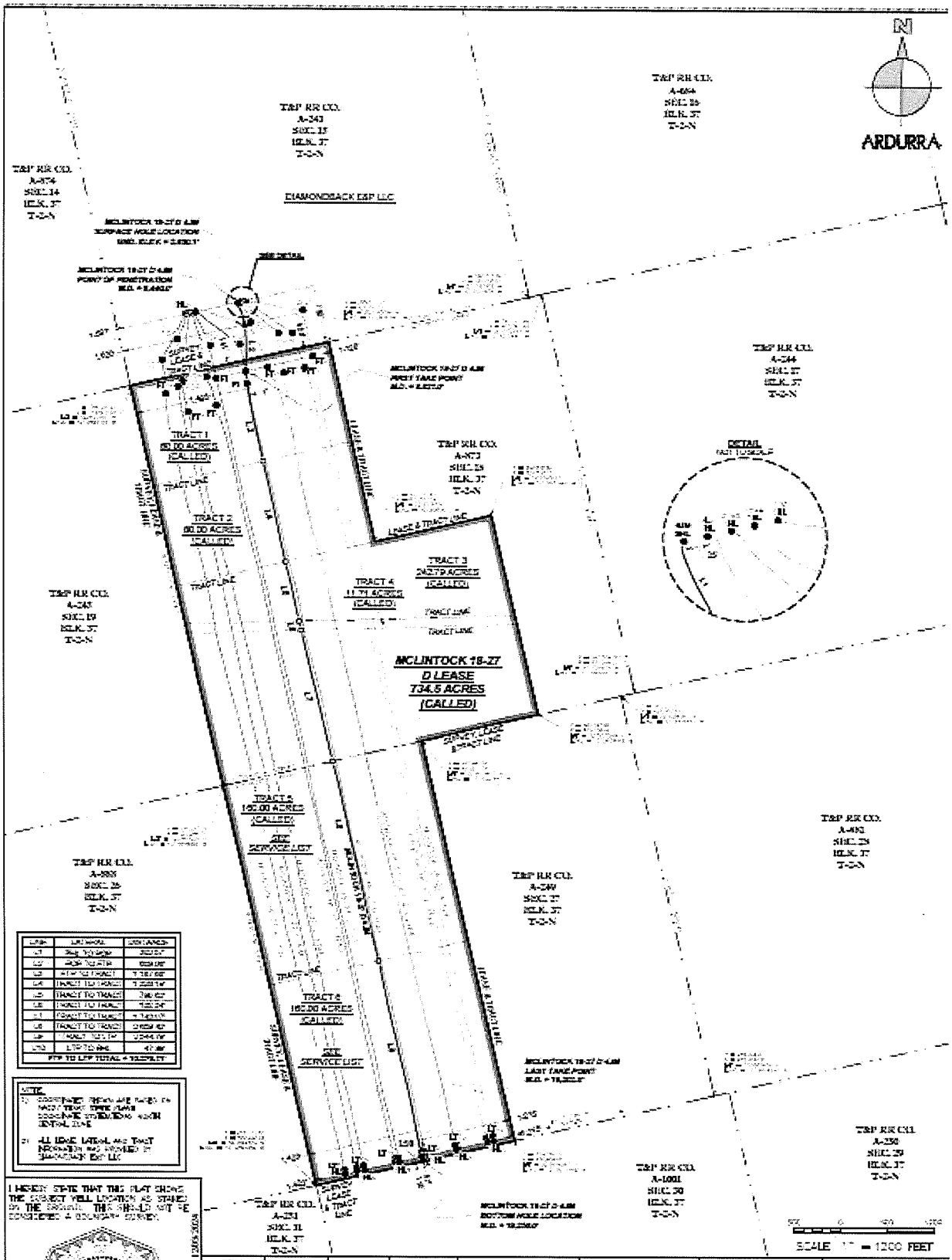

WELL NUMBER	LEASE CALLS	SURVEY CALLS	MEASURED DEPTH	NAD27 TEXAS STATE PLANE COORDINATES	NAD27 GEOGRAPHIC COORDINATES(DMS)	NAD27 GEOGRAPHIC COORDINATES(DD)	NAD83 GEOGRAPHIC COORDINATES(DD)
D 4JM SHL	OFF LEASE 750 FSL	1,526' FWL 750 FSL	- - -	Y = 205,037.63 X = 621,220.46	LAT. = 32°15'50.58" N LONG. = 101°57'51.20" W	LAT. = 32.3140661° N LONG. = 101.9642222° W	LAT. = 32.3140207° N LONG. = 101.9644125° W
D 4JM POP	OFF LEASE 455 FSL	1,627' FWL 455 FSL	8,440.0'	Y = 205,340.55 X = 621,324.04	LAT. = 32°15'53.78" N LONG. = 101°57'49.87" W	LAT. = 32.3149389° N LONG. = 101.9638740° W	LAT. = 32.3149930° N LONG. = 101.9642928° W
D 4JM FTP	1,129 FSL 141 FWL	1,467' FWL 141 FWL	8,931.0'	Y = 204,731.59 X = 621,345.28	LAT. = 32°15'49.74" N LONG. = 101°57'49.51" W	LAT. = 32.3138176° N LONG. = 101.9637531° W	LAT. = 32.3138320° N LONG. = 101.9641721° W
D 4JM LTP	1,215' FSL 115' FSL	1,427' FWL 115' FSL	19,250.0'	Y = 204,603.35 X = 623,594.45	LAT. = 32°15'10.55" N LONG. = 101°57'10.33" W	LAT. = 32.3029306° N LONG. = 101.9528900° W	LAT. = 32.3029786° N LONG. = 101.9532577° W
D 4JM BHL	1,215' FSL 67' FSL	1,427' FWL 67' FSL	19,250.0'	Y = 204,558.35 X = 623,662.06	LAT. = 32°15'10.09" N LONG. = 101°57'10.10" W	LAT. = 32.3028047° N LONG. = 101.9528480° W	LAT. = 32.3028577° N LONG. = 101.9532087° W

I HEREBY STATE THAT THIS PLAT SHOWS THE CORRECT WELL LOCATION AS STAKED ON THE GROUND. THIS SHOULD NOT BE CONSIDERED A BOUNDARY SURVEY.

SERVICE T. CANALES
REGISTERED PROFESSIONAL LAND SURVEYOR
LICENSE NO. [illegible]

ARDURRA

AN AS-DRILLED PLAT FOR:
DIAMONDBACK E&P LLC
MCLINTOCK 18-27 D 4JM
SITUATED IN THE T&P RR CO. SURVEYS, SEC. [illegible]
SEC. 15 A-343, & SEC. 27 A-244, ALL BEING OUT OF BLOCK 37, T-2-N,
APPROXIMATELY [illegible] MILES NORTHWEST OF STANTON IN MARTIN COUNTY, TEXAS

DIVISION ORDER

Diamondback E & P LLC ("payor")
900 NW 63rd St., Ste. 200
Oklahoma City, OK 73116

Date: 4/1/2025
Prepared by: LM/SR

Property Number: 108932
Property Name: MCLINTOCK 18-27 K 11LS
Operator: DIAMONDBACK E & P LLC
County and State: MARTIN COUNTY TEXAS
Property Description:

Effective Date: FIRST SALES

Venture Name	MCLINTOCK 18-27 K 11LS (108232	TRACT	LEGAL DESCRIPTION	ACRES	LATERAL	TPF	PLAT LATERAL
Prospect							
County, St	MARTIN	1	80 acres, more or less, being the N/2 of the West 160 acres of the N/2 of Section 18, Block 37, Township-2-North, Texas & Pacific Railway Company Survey, Abstract No. 873, Martin County,	80.000000	1127.39000	0.10928187	L3
Unit Acres		2	80 acres, more or less, being the S/2 of the West 160 acres of the N/2 of Section 18, Block 37, Township-2-North, Texas & Pacific Railway Company Survey, Abstract No. 873, Martin County,	80.000000	1328.52000	0.12877810	L4
Eff Date	FIRST SALES	3	242.79 acres, more or less, being the West 254.4 acres of the S/2 of Section 18, Block 37, Township-2-North, Texas & Pacific Railway Company Survey, Abstract No. 873, Martin County, Texas, LESS AND EXCEPT 11.71 acres described in a Right-of-Way Deed dated April 1, 1939, recorded in Volume 44, Page 206,	242.790000	2537.04000	0.24592419	L5
Matter No.		4	11.71 acres, more or less, being part of Section 18, Block 37, Township-2-North, Texas & Pacific Railway Company Survey, Abstract No. 873, Martin County, Texas, more particularly described in a Right-of-Way Deed dated April 1, 1939, recorded in Volume 44, Page 206, Martin County Deed Records, from G.T. Hall and wife, Florence Hall, to the State of Texas.	11.710000	120.94000	0.01172314	L6
Landman/DOA		5	160 acres, more or less, being the NW/4 of Section 27, Block 37, Township-2-North, Texas & Pacific Railway Company Survey, Abstract No. 249, Martin County, Texas.	160.000000	2658.52000	0.25769967	L8
Formation	SURFACE TO BASE OF WOLFC	6	160 acres, more or less, being the SW/4 of Section 27, Block 37, Township-2-North, Texas & Pacific Railway Company Survey, Abstract No. 249, Martin County, Texas.	160.000000	2543.94000	0.24659303	L9
DOTO							
				734.500000	10316.35000	1.00000000	

The undersigned severally and not jointly certifies it is the legal owner of the interest set out below of all the oil and related liquid hydrocarbons and gas and associated hydrocarbons produced from the property described below

Production Oil X Gas X Other X

Owner No/Name	Decimal Interest	Interest Type	Pay Code	Owner ISQ	Suspense Description
1080006582 AR MIDLAND LPALLIANCE ROYALTY LLC 2100 ROSS AVE STE 1870 LB-9 DALLAS, TX 75201	0.00060398	RI	SUSPEND	01	DIVISION ORDER NOT SIGNED

THIS AGREEMENT DOES NOT AMEND ANY LEASE OR OPERATING AGREEMENT BETWEEN THE INTEREST OWNERS AND THE LESSEE OR OPERATOR OR ANY OTHER CONTRACTS FOR THE PURCHASE OF OIL OR GAS.

The following provisions apply to each interest owner ("owner") who executes this agreement:

TERMS OF SALE: The undersigned will be paid in accordance with the division of interests set out above. The payor shall pay all parties in accordance with the terms of the oil and gas lease(s).

PAYMENT: From the effective date, after initial payment is made, payment is to be made monthly by payor's check, based on this division of interest not later than 60 days after the end of the calendar month in which oil production is sold and 90 days after the month in which gas is sold from the property listed above, less taxes required by law to be deducted and remitted by payor as purchaser. Payments of less than $100 may be accrued before disbursement until the total amount equals $100 or more, or until 12 months' proceeds accumulate, whichever occurs first. However, the payor may hold accumulated proceeds of less than $10 until production ceases or the payor's responsibility for making payment for production ceases, whichever occurs first. Payee agrees to refund to payor any amounts attributable to an interest or part of an interest that payee does not own.

INDEMNITY: The owner agrees to indemnify and hold payor harmless from all liability resulting from payments made to the owner in accordance with such division of interest, including but not limited to attorney fees or judgments in connection with any suit that affects the owner's interest to which payor is made a party.

DISPUTE; WITHHOLDING OF FUNDS: If a suit is filed that affects the interest of the owner, written notice shall be given to payor by the owner together with a copy of the complaint or petition filed. In the event of a claim or dispute that affects title to the division of interest credited herein, payor is authorized to withhold payments accruing to such interest, without interest unless otherwise required by applicable statute, until the claim or dispute is settled.

TERMINATION: Termination of this agreement is effective on the first day of the month that begins after the 30th day after the date written notice of termination is received by either party.

NOTICES: The owner agrees to notify payor in writing of any change in the division of interest, including changes of interest contingent on payment of money or expiration of time.
No change of interest is binding on payor until the recorded copy of the instrument of change or documents satisfactorily evidencing such change are furnished to payor at the time the change occurs.
Any change of interest shall be made effective on the first day of the month following receipt of such notice by payor.
Any correspondence regarding this agreement shall be furnished to the addresses listed unless otherwise advised by either party.
In addition to the legal rights provided by the terms and provisions of this division order, an owner may have certain statutory rights under the laws of this state.

Owner(s) Signature(s)/Title: _____

Owner(s) SS/Tax ID #: _____

Owner Home Telephone #: _____

Owner Work Telephone #: _____

Owner e-mail address: _____

Failure to furnish your Social Security or Tax I.D. number wi
and any tax withheld will no

PLEASE SIGN A

AR Midland, LP
BY: Dale Operating Company, as attorney-in-fact
BY: Steve Abney, Co-CEO
TAX ID # 84-2727335
2100 Ross Ave, Suite 1870, LB-9
Dallas, TX 75201
Contact: shaneh@dale-energy.com
Phone: (214) 888-8588

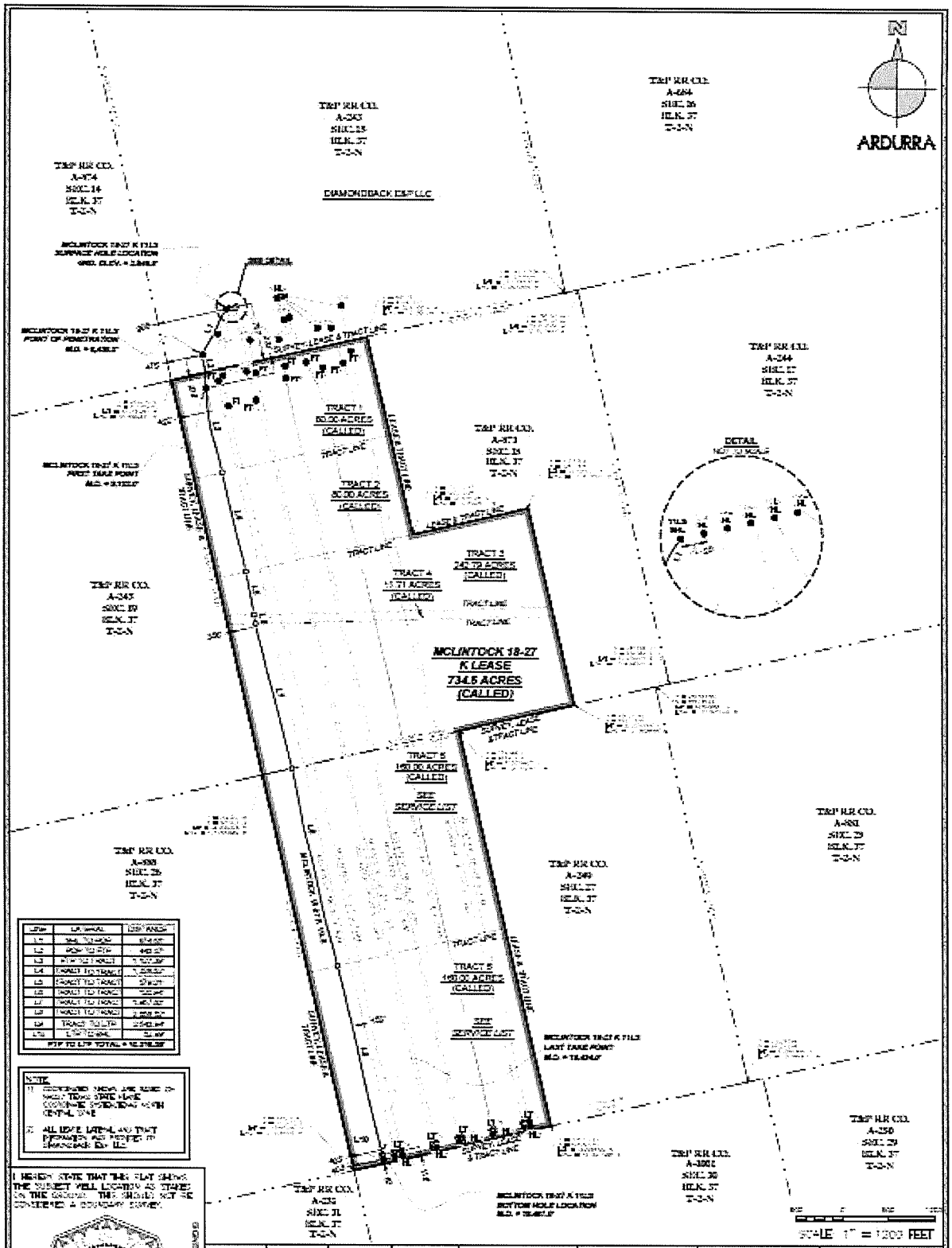

WELL NUMBER	LEASE CALLS	SURVEY CALLS	MEASURED DEPTH	NAD27 TEXAS STATE PLANE COORDINATES	NAD27 GEOGRAPHIC COORDINATES(DMS)	NAD27 GEOGRAPHIC COORDINATES(DD)	NAD83 GEOGRAPHIC COORDINATES(DD)
K 11LS SHL	OFF LEASE 707 FSL	909' FWL 707' FSL	- - -	Y = 265,476.43 X = 820,570.42	LAT. = 32°13'50.78" N LONG. = 101°57'20.90" W	LAT. = 32.1357728° N LONG. = 101.9558028° W	LAT. = 32.1358770° N LONG. = 101.9557908° W
K 11LS POP	OFF LEASE 230 FSL	475' FWL 230' FSL	5,450.0'	Y = 264,974.59 X = 820,265.80	LAT. = 32°13'50.77" N LONG. = 101°57'23.15" W	LAT. = 32.1374044° N LONG. = 101.9575342° W	LAT. = 32.1374195° N LONG. = 101.9575532° W
K 11LS FTP	402' FWL 200' FNL	402' FWL 200' FNL	9,100.0'	Y = 264,423.86 X = 820,312.01	LAT. = 32°13'48.37" N LONG. = 101°57'21.38" W	LAT. = 32.1328756° N LONG. = 101.9559022° W	LAT. = 32.1328941° N LONG. = 101.9557412° W
K 11LS LTP	402' FWL 110' FSL	402' FWL 110' FSL	19,404.0'	Y = 254,376.61 X = 820,800.19	LAT. = 32°11'07.38" N LONG. = 101°57'26.79" W	LAT. = 32.1852052° N LONG. = 101.9574332° W	LAT. = 32.1852441° N LONG. = 101.9572910° W
K 11LS BHL	402' FWL 62' FSL	402' FWL 62' FSL	19,457.0'	Y = 254,324.85 X = 820,811.51	LAT. = 32°11'07.30" N LONG. = 101°57'26.63" W	LAT. = 32.1852030° N LONG. = 101.9572303° W	LAT. = 32.1852303° N LONG. = 101.9572475° W

ARDURRA

AN AS-DRILLED PLAT FOR:
DIAMONDBACK E&P LLC
MCLINTOCK 18-27 K 11LS

DIVISION ORDER

Diamondback E & P LLC ("payor")
900 NW 63rd St., Ste. 200
Oklahoma City, OK 73116

Date: 4/1/2025
Prepared by: LM/SR

Property Number: 108935
Property Name: MCLINTOCK 18-27 D 16WA
Operator: DIAMONDBACK E & P LLC
County and State: MARTIN COUNTY TEXAS
Property Description:

Effective Date: FIRST SALES

Venture Name	MCLINTOCK 18-27 D 16WA (108935	TRACT	LEGAL DESCRIPTION	ACRES	LATERAL	TPF	PLAT LATERAL
Prospect							
County, St	MARTIN	1	80 acres, more or less, being the N/2 of the West 160 acres of the N/2 of Section 18, Block 37, Township-2-North, Texas & Pacific Railway Company Survey, Abstract No. 873, Martin County, Texas.	80.000000	1031.36000	0.10091950	L3
Unit Acres		2	80 acres, more or less, being the S/2 of the West 160 acres of the N/2 of Section 18, Block 37, Township-2-North, Texas & Pacific Railway Company Survey, Abstract No. 873, Martin County, Texas.	80.000000	1328.18000	0.12996361	L4
Eff Date	FIRST SALES	3	242.79 acres, more or less, being the West 254.4 acres of the S/2 of Section 18, Block 37, Township-2-North, Texas & Pacific Railway Company Survey, Abstract No. 873, Martin County, Texas, LESS AND EXCEPT 11.71 acres described in a Right-of-Way Deed dated April 1, 1939, recorded in Volume 44, Page 206, Martin	242.790000	2534.60000	0.24801289	L5
Matter No.		4	11.71 acres, more or less, being part of Section 18, Block 37, Township-2-North, Texas & Pacific Railway Company Survey, Abstract No. 873, Martin County, Texas, more particularly described in a Right-of-Way Deed dated April 1, 1939, recorded in Volume 44, Page 206, Martin County Deed Records, from G.T. Hall and wife, Florence Hall, to the State of Texas.	11.710000	121.52000	0.01189084	L6
Landman/DOA		5	160 acres, more or less, being the NW/4 of Section 27, Block 37, Township-2-North, Texas & Pacific Railway Company Survey, Abstract No. 249, Martin County, Texas.	160.000000	2659.53000	0.26023741	L8
Formation	SURFACE TO BASE OF WOLFCAMP	6	160 acres, more or less, being the SW/4 of Section 27, Block 37, Township-2-North, Texas & Pacific Railway Company Survey, Abstract No. 249, Martin County, Texas.	160.000000	2544.44000	0.24897575	L9
DOTO							
				734.500000	10219.63000	1.00000000	

The undersigned severally and not jointly certifies it is the legal owner of the interest set out below of all the oil and related liquid hydrocarbons and gas and associated hydrocarbons produced from the property described below

Production Oil X Gas X Other X

Owner No/Name	Decimal Interest	Interest Type	Pay Code	Owner ISQ	Suspense Description
1080006582 AR MIDLAND LPALLIANCE ROYALTY LLC 2100 ROSS AVE STE 1870 LB-9 DALLAS, TX 75201	0.00060993	RI	SUSPEND	01	DIVISION ORDER NOT SIGNED

THIS AGREEMENT DOES NOT AMEND ANY LEASE OR OPERATING AGREEMENT BETWEEN THE INTEREST OWNERS AND THE LESSEE OR OPERATOR OR ANY OTHER CONTRACTS FOR THE PURCHASE OF OIL OR GAS.

The following provisions apply to each interest owner ("owner") who executes this agreement:

TERMS OF SALE: The undersigned will be paid in accordance with the division of interests set out above. The payor shall pay all parties in accordance with the terms of the oil and gas lease(s).

PAYMENT: From the effective date, after initial payment is made, payment is to be made monthly by payor's check, based on this division of interest not later than 60 days after the end of the calendar month in which oil production is sold and 90 days after the month in which gas is sold from the property listed above, less taxes required by law to be deducted and remitted by payor as purchaser. Payments of less than $100 may be accrued before disbursement until the total amount equals $100 or more, or until 12 months' proceeds accumulate, whichever occurs first. However, the payor may hold accumulated proceeds of less than $10 until production ceases or the payor's responsibility for making payment for production ceases, whichever occurs first. Payee agrees to refund to payor any amounts attributable to an interest or part of an interest that payee does not own.

INDEMNITY: The owner agrees to indemnify and hold payor harmless from all liability resulting from payments made to the owner in accordance with such division of interest, including but not limited to attorney fees or judgments in connection with any suit that affects the owner's interest to which payor is made a party.

DISPUTE; WITHHOLDING OF FUNDS: If a suit is filed that affects the interest of the owner, written notice shall be given to payor by the owner together with a copy of the complaint or petition filed. In the event of a claim or dispute that affects title to the division of interest credited herein, payor is authorized to withhold payments accruing to such interest, without interest unless otherwise required by applicable statute, until the claim or dispute is settled.

TERMINATION: Termination of this agreement is effective on the first day of the month that begins after the 30th day after the date written notice of termination is received by either party.

NOTICES: The owner agrees to notify payor in writing of any change in the division of interest, including changes of interest contingent on payment of money or expiration of time.
No change of interest is binding on payor until the recorded copy of the instrument of change or documents satisfactorily evidencing such change are furnished to payor at the time the change occurs.
Any change of interest shall be made effective on the first day of the month following receipt of such notice by payor.
Any correspondence regarding this agreement shall be furnished to the addresses listed unless otherwise advised by either party.
In addition to the legal rights provided by the terms and provisions of this division order, an owner may have certain statutory rights under the laws of this state.

Owner(s) Signature(s)/Title: _____

Owner(s) SS/Tax ID #: _____

Owner Home Telephone #: _____

Owner Work Telephone #: _____

Owner e-mail address: _____

Failure to furnish your Social Security or Tax I.D. number and any tax withheld will

PLEASE SIGN

AR Midland, LP
BY: Dale Operating Company, as attorney-in-fact
BY: Steve Abney, Co-CEO
TAX ID # 84-2727335
2100 Ross Ave, Suite 1870, LB-9
Dallas, TX 75201
Contact: shaneh@dale-energy.com
Phone: (214) 888-8585

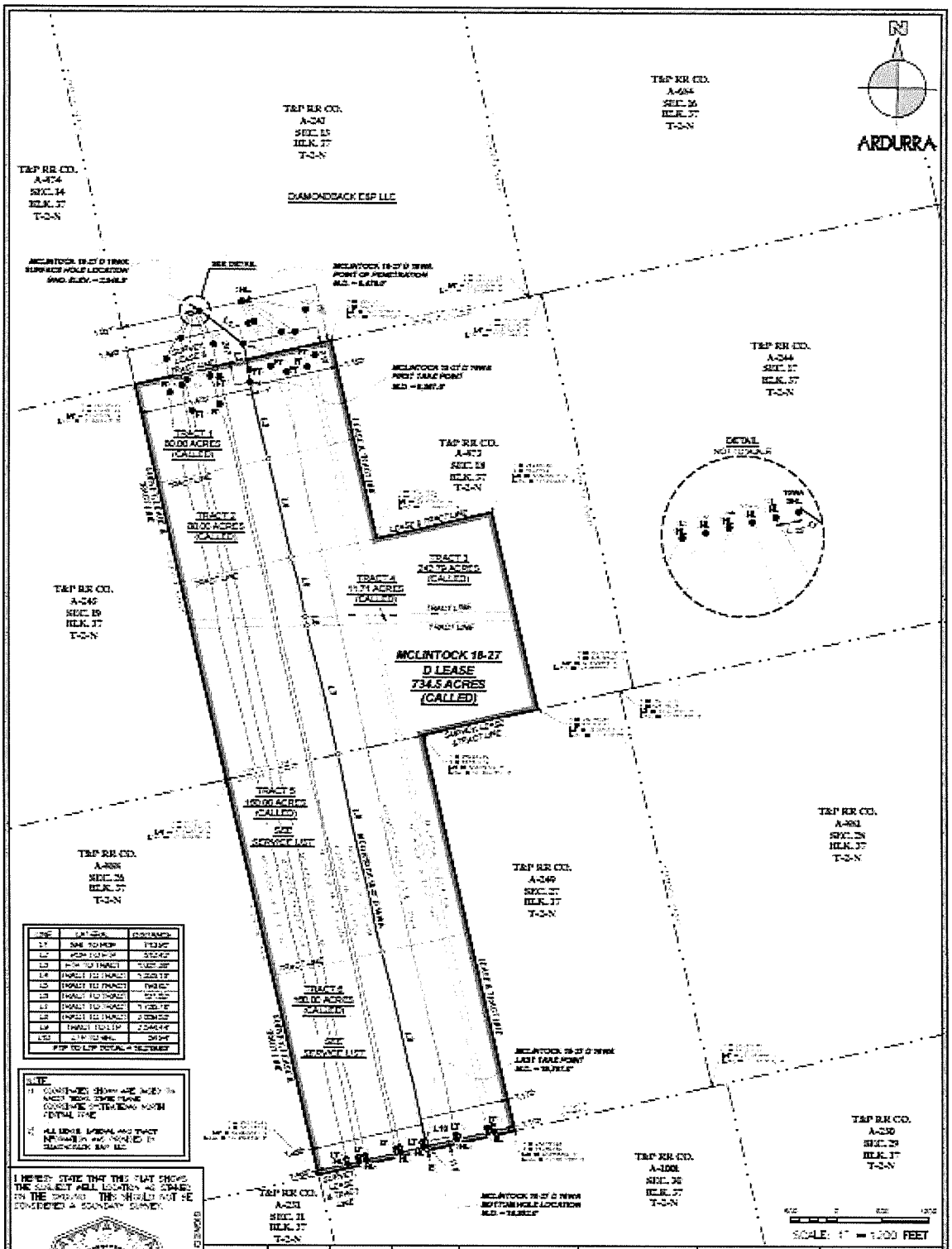

LINE	LAT./BEAR.	DISTANCE
L1	SHL TO POP	[illegible]
L2	POP TO POP	[illegible]
L3	POP TO TRACT	[illegible]
L4	TRACT TO TRACT	[illegible]
L5	TRACT TO TRACT	[illegible]
L6	TRACT TO TRACT	[illegible]
L7	TRACT TO TRACT	[illegible]
L8	TRACT TO TRACT	[illegible]
L9	TRACT TO LTP	[illegible]
L10	LTP TO BHL	[illegible]
FTP TO LTP TOTAL = [illegible]		

NOTE:

1. CONTINUED [illegible] ACRES IN [illegible] TRACTS CONTAINS [illegible] CONTAINS [illegible] NORTH CENTRAL ZONE
2. ALL LEASE, TRACTS AND THAT [illegible] OWNED BY DIAMONDBACK E&P LLC

I HEREBY STATE THAT THIS PLAT SHOWS THE SUBJECT WELL LOCATION AS STAKED ON THE GROUND. THIS SHOULD NOT BE CONSIDERED A BOUNDARY SURVEY.

SERGIO F. GONZALEZ
REGISTERED PROFESSIONAL LAND SURVEYOR
LICENSE NO. [illegible]

WELL NUMBER	LEASE CALLS	SURVEY CALLS	MEASURED DEPTH	NAD27 TEXAS STATE PLANE COORDINATES	NAD27 GEOGRAPHIC COORDINATES(DMS)	NAD27 GEOGRAPHIC COORDINATES(DD)	NAD83 GEOGRAPHIC COORDINATES(DD)
D 16WA SHL	OFF LEASE 757 FSL	1,031' FWL 757 FSL	- - -	Y = [illegible] X = [illegible]	LAT. = [illegible] N LONG. = [illegible] W	LAT. = [illegible] N LONG. = [illegible] W	LAT. = [illegible] N LONG. = [illegible] W
D 16WA POP	OFF LEASE 315 FSL	1,497' FWL 315 FSL	8,476.2	Y = [illegible] X = [illegible]	LAT. = [illegible] N LONG. = [illegible] W	LAT. = [illegible] N LONG. = [illegible] W	LAT. = [illegible] N LONG. = [illegible] W
D 16WA FTP	[illegible] FEL 287 FNL	1,470' FWL 287 FNL	9,567.2	Y = [illegible] X = [illegible]	LAT. = [illegible] N LONG. = [illegible] W	LAT. = [illegible] N LONG. = [illegible] W	LAT. = [illegible] N LONG. = [illegible] W
D 16WA LTP	[illegible] FEL 115' FSL	1,499' FWL 115' FSL	19,797.0	Y = [illegible] X = [illegible]	LAT. = [illegible] N LONG. = [illegible] W	LAT. = [illegible] N LONG. = [illegible] W	LAT. = [illegible] N LONG. = [illegible] W
D 16WA BHL	[illegible] FEL 80' FSL	1,465' FWL 80' FSL	19,853.0	Y = [illegible] X = [illegible]	LAT. = [illegible] N LONG. = [illegible] W	LAT. = [illegible] N LONG. = [illegible] W	LAT. = [illegible] N LONG. = [illegible] W

ARDURRA

AN AS-DRILLED PLAT FOR:

DIAMONDBACK E&P LLC

MCLINTOCK 18-27 D 16WA

SITUATED IN THE T&P RR CO. SURVEYS, SEC. 18, A-243, SEC. 14, A-474, SEC. 27, A-249, ALL BEING SIT IN BLOCK 37, T-2-N, APPROXIMATELY 16.1 MILES SOUTHWEST OF STANTON IN MARTIN COUNTY, TEXAS

PLOT DATE: [illegible]

DIVISION ORDER

Diamondback E & P LLC ("payor")
900 NW 63rd St., Ste. 200
Oklahoma City, OK 73116

Date: 4/1/2025
Prepared by: LM/SR

Property Number: 108938
Property Name: MCLINTOCK 18-27 V 22WB
Operator: DIAMONDBACK E & P LLC
County and State: MARTIN COUNTY TEXAS
Property Description:

Effective Date: FIRST SALES

Venture Name	MCLINTOCK 18-27 V 22WB (108938	TRACT	LEGAL DESCRIPTION	ACRES	LATERAL	TPF	PLAT LATERAL
Prospect							
County, St	MARTIN	1	80 acres, more or less, being the N/2 of the West 160 acres of the N/2 of Section 18, Block 37, Township-2-North, Texas & Pacific Railway Company Survey, Abstract No. 873, Martin County, Texas.	80.000000	835.72000	0.08336725	L3
Unit Acres		2	80 acres, more or less, being the S/2 of the West 160 acres of the N/2 of Section 18, Block 37, Township-2-North, Texas & Pacific Railway Company Survey, Abstract No. 873, Martin County, Texas.	80.000000	1328.36000	0.13251055	L4
Eff Date	FIRST SALES	3	242.79 acres, more or less, being the West 254.4 acres of the S/2 of Section 18, Block 37, Township-2-North, Texas & Pacific Railway Company Survey, Abstract No. 873, Martin County, Texas, LESS AND EXCEPT 11.71 acres described in a Right-of-Way Deed dated April 1, 1939, recorded in Volume 44, Page 206, Martin	242.790000	2534.31000	0.25281010	L5
Matter No.		4	11.71 acres, more or less, being part of Section 18, Block 37, Township-2-North, Texas & Pacific Railway Company Survey, Abstract No. 873, Martin County, Texas, more particularly described in a Right-of-Way Deed dated April 1, 1939, recorded in Volume 44, Page 206, Martin County Deed Records, from G.T. Hall and wife, Florence Hall, to the State of Texas.	11.710000	122.03000	0.01217310	L6
Landman/DOA		5	160 acres, more or less, being the NW/4 of Section 27, Block 37, Township-2-North, Texas & Pacific Railway Company Survey, Abstract No. 249, Martin County, Texas.	160.000000	2659.13000	0.26526152	L8
Formation	SURFACE TO BASE OF WOLFCAMP	6	160 acres, more or less, being the SW/4 of Section 27, Block 37, Township-2-North, Texas & Pacific Railway Company Survey, Abstract No. 249, Martin County, Texas.	160.000000	2545.01000	0.25387748	L9
DOTO							
				734.500000	10024.56000	1.00000000	

The undersigned severally and not jointly certifies it is the legal owner of the interest set out below of all the oil and related liquid hydrocarbons and gas and associated hydrocarbons produced from the property described below

Production Oil X Gas X Other X

Owner No/Name	Decimal Interest	Interest Type	Pay Code	Owner ISQ	Suspense Description
1080006582 AR MIDLAND LPALLIANCE ROYALTY LLC 2100 ROSS AVE STE 1870 LB-9 DALLAS, TX 75201	0.00062171	RI	SUSPEND	01	DIVISION ORDER NOT SIGNED

THIS AGREEMENT DOES NOT AMEND ANY LEASE OR OPERATING AGREEMENT BETWEEN THE INTEREST OWNERS AND THE LESSEE OR OPERATOR OR ANY OTHER CONTRACTS FOR THE PURCHASE OF OIL OR GAS.

The following provisions apply to each interest owner ("owner") who executes this agreement:

TERMS OF SALE: The undersigned will be paid in accordance with the division of interests set out above. The payor shall pay all parties in accordance with the terms of the oil and gas lease(s).

PAYMENT: From the effective date, after initial payment is made, payment is to be made monthly by payor's check, based on this division of interest not later than 60 days after the end of the calendar month in which oil production is sold and 90 days after the month in which gas is sold from the property listed above, less taxes required by law to be deducted and remitted by payor as purchaser. Payments of less than $100 may be accrued before disbursement until the total amount equals $100 or more, or until 12 months' proceeds accumulate, whichever occurs first. However, the payor may hold accumulated proceeds of less than $10 until production ceases or the payor's responsibility for making payment for production ceases, whichever occurs first. Payee agrees to refund to payor any amounts attributable to an interest or part of an interest that payee does not own.

INDEMNITY: The owner agrees to indemnify and hold payor harmless from all liability resulting from payments made to the owner in accordance with such division of interest, including but not limited to attorney fees or judgments in connection with any suit that affects the owner's interest to which payor is made a party.

DISPUTE; WITHHOLDING OF FUNDS: If a suit is filed that affects the interest of the owner, written notice shall be given to payor by the owner together with a copy of the complaint or petition filed. In the event of a claim or dispute that affects title to the division of interest credited herein, payor is authorized to withhold payments accruing to such interest, without interest unless otherwise required by applicable statute, until the claim or dispute is settled.

TERMINATION: Termination of this agreement is effective on the first day of the month that begins after the 30th day after the date written notice of termination is received by either party.

NOTICES: The owner agrees to notify payor in writing of any change in the division of interest, including changes of interest contingent on payment of money or expiration of time.
No change of interest is binding on payor until the recorded copy of the instrument of change or documents satisfactorily evidencing such change are furnished to payor at the time the change occurs.
Any change of interest shall be made effective on the first day of the month following receipt of such notice by payor.
Any correspondence regarding this agreement shall be furnished to the addresses listed unless otherwise advised by either party.
In addition to the legal rights provided by the terms and provisions of this division order, an owner may have certain statutory rights under the laws of this state.

Owner(s) Signature(s)/Title: _____

Owner(s) SS/Tax ID #: _____

Owner Home Telephone #: _____

Owner Work Telephone #: _____

Owner e-mail address: _____

Failure to furnish your Social Security or Tax I.D. number and any tax withheld will

PLEASE SIGN

AR Midland, LP
BY: Dale Operating Company, as attorney-in-fact
BY: Steve Abney, Co-CEO
TAX ID # 84-2727335
2100 Ross Ave, Suite 1870, LB-9
Dallas, TX 75201
Contact: shaneh@dale-energy.com
Phone: (214) 888-8588

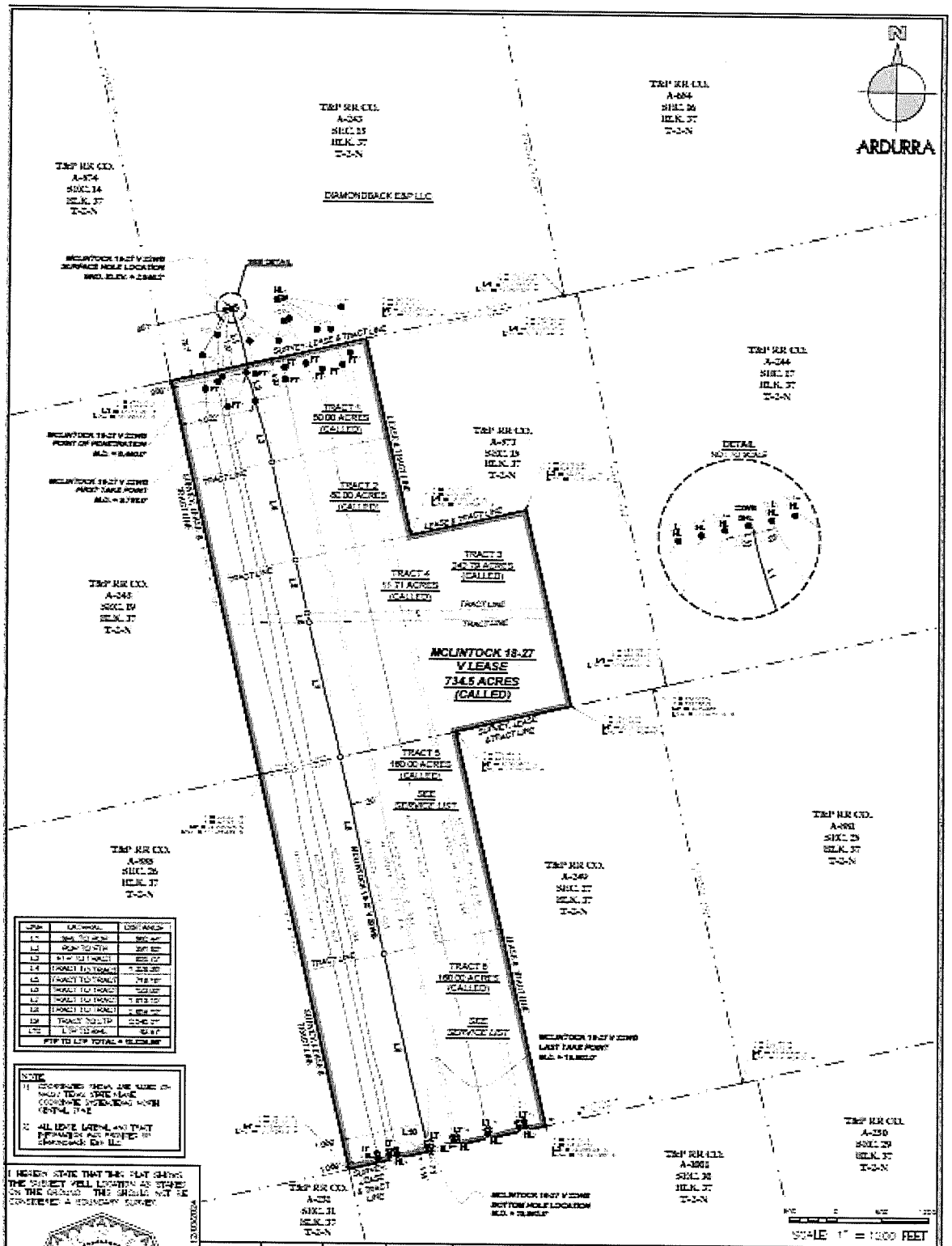

LINE	BEARING	DISTANCE
L1	SHL TO BHL	[illegible]
L2	FTP TO FTP	[illegible]
L3	LTP TO LTP	[illegible]
L4	TRACT TO TRACT	[illegible]
L5	TRACT TO TRACT	[illegible]
L6	TRACT TO TRACT	[illegible]
L7	TRACT TO TRACT	[illegible]
L8	TRACT TO TRACT	[illegible]
L9	TRACT TO LTP	[illegible]
L10	LTP TO BHL	[illegible]
FTP TO LTP TOTAL = [illegible]		

NOTE
1) COORDINATES SHOWN ARE BASED ON NAD27 TEXAS STATE PLANE COORDINATE SYSTEM, SOUTH CENTRAL ZONE
2) ALL LEASE, LATERAL AND TRACT INFORMATION ARE PROVIDED BY DIAMONDBACK E&P LLC

I HEREBY STATE THAT THIS PLAT SHOWS THE SUBJECT WELL LOCATION AS STAKED ON THE GROUND. THIS SHALL NOT BE CONSIDERED A BOUNDARY SURVEY.

SERGIO J. CANALES
REGISTERED PROFESSIONAL LAND SURVEYOR
LICENSE NO. [illegible]

WELL NUMBER	LEASE CALLS	SURVEY CALLS	MEASURED DEPTH	NAD27 TEXAS STATE PLANE COORDINATES	NAD27 GEOGRAPHIC COORDINATES(DMS)	NAD27 GEOGRAPHIC COORDINATES(DD)	NAD83 GEOGRAPHIC COORDINATES(DD)
V 22WB SHL	OFF LEASE 737 FSL	98' FWL 737 FSL	- - -	Y = [illegible] X = [illegible]	LAT. = [illegible] N LONG. = [illegible] W	LAT. = [illegible] N LONG. = [illegible] W	LAT. = [illegible] N LONG. = [illegible] W
V 22WB POP	565 FNL 103 FSL	565 FWL 103 FSL	[illegible]	Y = [illegible] X = [illegible]	LAT. = [illegible] N LONG. = [illegible] W	LAT. = [illegible] N LONG. = [illegible] W	LAT. = [illegible] N LONG. = [illegible] W
V 22WB FTP	1,022 FNL 493 FNL	1,022 FWL 493 FNL	[illegible]	Y = [illegible] X = [illegible]	LAT. = [illegible] N LONG. = [illegible] W	LAT. = [illegible] N LONG. = [illegible] W	LAT. = [illegible] N LONG. = [illegible] W
V 22WB LTP	1,022 FNL 114' FSL	1,022 FWL 114' FSL	[illegible]	Y = [illegible] X = [illegible]	LAT. = [illegible] N LONG. = [illegible] W	LAT. = [illegible] N LONG. = [illegible] W	LAT. = [illegible] N LONG. = [illegible] W
V 22WB BHL	1,022 FNL 77 FSL	1,022 FWL 77 FSL	[illegible]	Y = [illegible] X = [illegible]	LAT. = [illegible] N LONG. = [illegible] W	LAT. = [illegible] N LONG. = [illegible] W	LAT. = [illegible] N LONG. = [illegible] W

ARDURRA

AN AS-DRILLED PLAT FOR
DIAMONDBACK E&P LLC
MCLINTOCK 18-27 V 22WB
SITUATED IN THE T&P RR CO. SURVEY, SEC. 15, A-573
SEC. 18 [illegible] & SEC. 27, A-244, ALL BEING OUT OF BLOCK 37, T-2-N